User Manual

TD2000 G3 3D Intelligent Sensor

Quick Configuration Guide V1.1_202505

Table of Contents

Introduction 3
About this Document 3
Prerequisites for Configuration 3
TD2000 G3 3D Intelligent Sensor Web Interface 4
Using the Web Interface 4
Accessing the Web Interface 4
Introduction to the Main Interface 4
Configuring The Sensor 5
Device Configuration 5
Network Configuration 6
Service Configuration 7
Configure The Report Server 7
Configure The Time Server 9
Configure The Remote Control Server 10
Configure The Computing Server 11
Configure The Heart Beat Server 12
Video Configuration 13
Recording 13
Major Stream 15
Camera Configuration 16
Path Linking Configuration 17
Configuration Procedure 17
Counting Configuration 21
Zone Editing 22
Dwelling Configuration 24
Dwell Zone Editing 25
Advanced Options 26
Device Management 26
User Management 27
Other Instructions 28
Hidden Info Configuration 28
Wi-Fi 29
RTSP Video Streaming 30
Product Appearance and Interfaces 31
Signal Light Indicators 31

Introduction

The TD2000 G3 is an advanced deep learning 3D sensor designed to set new standards in traffic counting with unparalleled accuracy and a comprehensive feature set. It is ideal for top-view mounting and excels in both traffic counting and comprehensive behavioral analytics based on traffic counting. Compared to its previous generations like TD2000, the TD2000 G3 boasts exceptional AI capabilities. When working with the TD4000 series of edge computing units, it supports Precise Count with the advanced Re-ID functionalities that filter out inflated counts, such as staff, repeat visitors, couriers, and brief visitors, ensuring precise customer data.

It provides versatile staff exclusion methods: 1) a convenient Staff Exclusion Button for easy implementation, 2) embedded deep learning-based uniform identification that requires no additional devices or tags, saving operational costs, and 3) precise Re-ID staff identification. Please refer to the Datasheet of the product should you need more details on the features that can be enabled by using the device.

The TD sensor technical documentation suite includes:

- Quick Start Guide
- ***Quick Configuration Guide (this document)***
- TD Remote Control Server User Guide

About this Document

The *TD2000 G3 3D Intelligent Sensor Quick Configuration Guide* details basic configuration instructions for IT departments and implementation engineers to set up the device properly for operating in most cases. For advanced configurations, contact our technical representatives for assistance.

Prerequisites for Configuration

Before attempting to configure the sensor, make sure that you have installed the Sensor hardware components by following the steps as described in the *TD2000 G3 3D Intelligent Sensor Quick Start Guide*.

TD2000 G3 3D Intelligent Sensor Web Interface

Using the Web Interface

The TD2000 G3 3D Intelligent Sensor allows you to configure and manage the sensor directly through a browser-based web interface.

To fully access the web interface, your computer should be installed with Internet Explorer 10.0 or newer, or the latest version Google Chrome or Mozilla Firefox.

Accessing the Web Interface

To access the web interface, input the default IP address of 192.168.1.8 into the browser's address bar then you will be led to the main interface of the portal. All sensors are shipped to customers with this default IP address. Make sure your computer's IP is set at the same network segment as the sensor before logging in.

Introduction to the Main Interface

On the main interface, you can find the navigating menu composed of the following configuration sectors for you to set up the sensor properly.

Device Config: configure basic device information such as store and device ID.

Network Config: set the network parameters for the sensor.

Service Config: set the servers: report server, time server, remote control server, computing server, heart beat server

Video Config: set video relevant parameters, start record different types of videos and download video recorded.

Camera Config: set lens information and device mounting parameters.

Path Linking: set parameters for multiple sensors to work jointly for covering greater area or wider entrances.

Counting Config: set customer entry/exit areas, view the location and traffic data.

Dwelling Config: set dwell zones, view the location and dwelling data.

Advanced Options: provide firmware upgrade, log viewing, user management, reboot, and other operations.

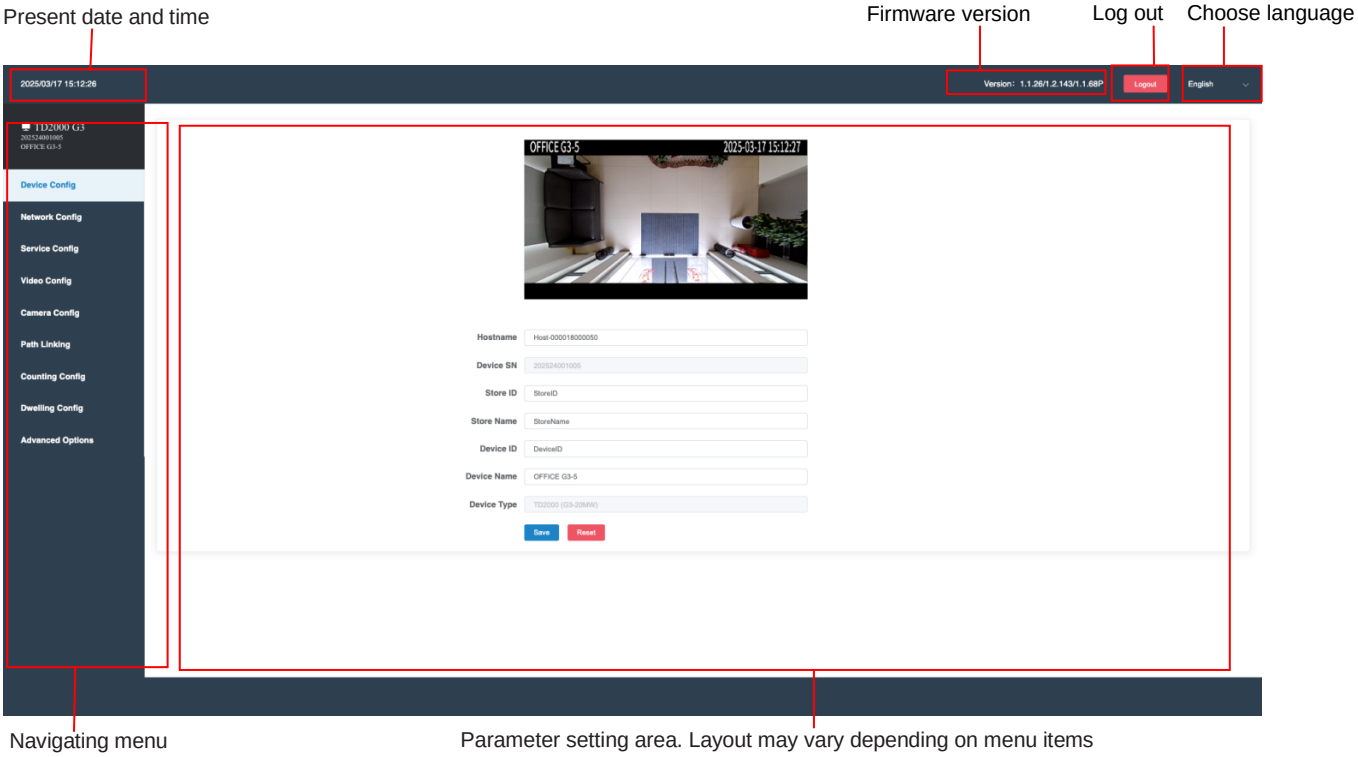

Configuring The Sensor

Once you access the web interface, navigate the menu options on the left side and start configuring all necessary parameters by following the forthcoming instructions.

Device Configuration

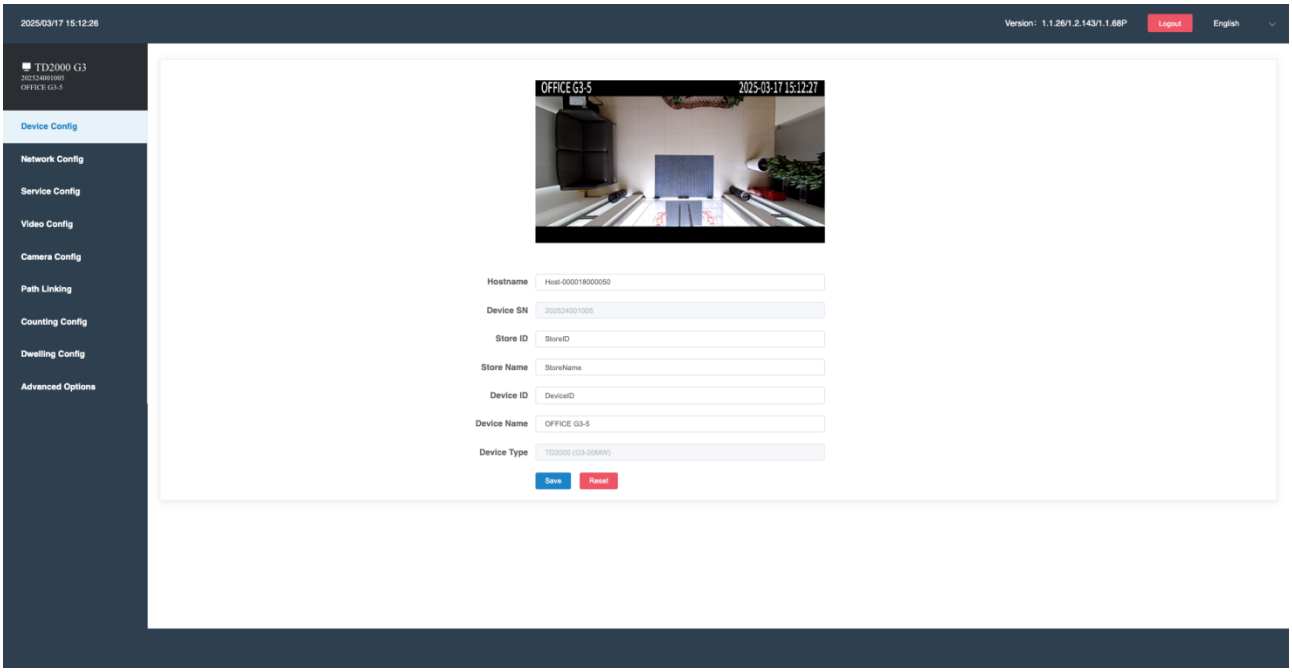

Real Time Image: the left lens' captured image is displayed as the real time image.

Host Name: enter the Hostname for the sensor on your network.

Device SN: display the serial number of the device.

Store ID: enter the customer-specific classification for a store or site number.

Store Name: enter the customer-specific classification for a store or site number, often a reference to the city or location where the store is.

Device ID: enter an alphanumeric code to uniquely identify the sensor within a site.

Device Name: enter a brief name for the sensor that is derived from Device ID.

Device Type: display the product model and code.

[Save]: save the parameters as set. Note the changes you've made will not be saved until you click the button.

[Reset]: restore the current values back to the factory defaults.

Note: The information fields shall not be left empty. When you input, use digits, English letters, blank, underscore, dash, or English brackets. Each field shall not be ended with blank, of which the length of input shall not exceed 30 characters.

Network Configuration

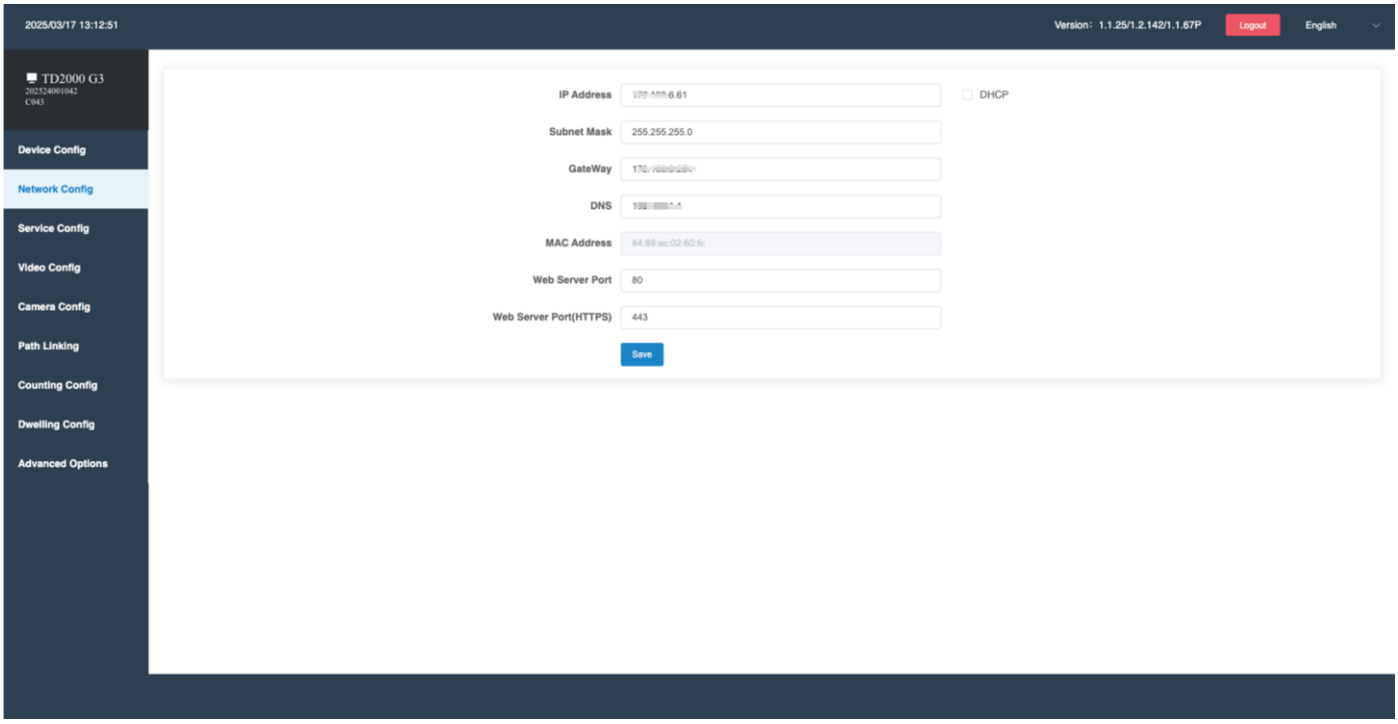

IP Address: enter the IP address for the sensor on your network. Default IP Address is **192.168.1.8**.
DHCP is supported, and you may enable it by ticking the choice.

Subnet Mask: enter the Network Mask for the sensor on your network.

Gateway: enter the Default Gateway IP address for the sensor on your network.

DNS: enter the DNS (Domain Name System) Server IP address for the sensor on your network.

MAC Address: display the sensor's MAC address

Web Server Port: Enter the Port number for the sensor for HTTP communication.

Web Server Port (HTTPS): Enter the Port number for the sensor for HTTPS communication.

[Save]: Store the effects of a change.

Service Configuration

The Service Config allows you to configure the Report Server, Time Server and Remote Control Server, Computing Server, and Heart Beat Server, which are listed in different tabs on the page. The default page of Service Config presents parameters relevant to the Report Server. You need to set parameters on all tabs of the page.

Configure The Report Server

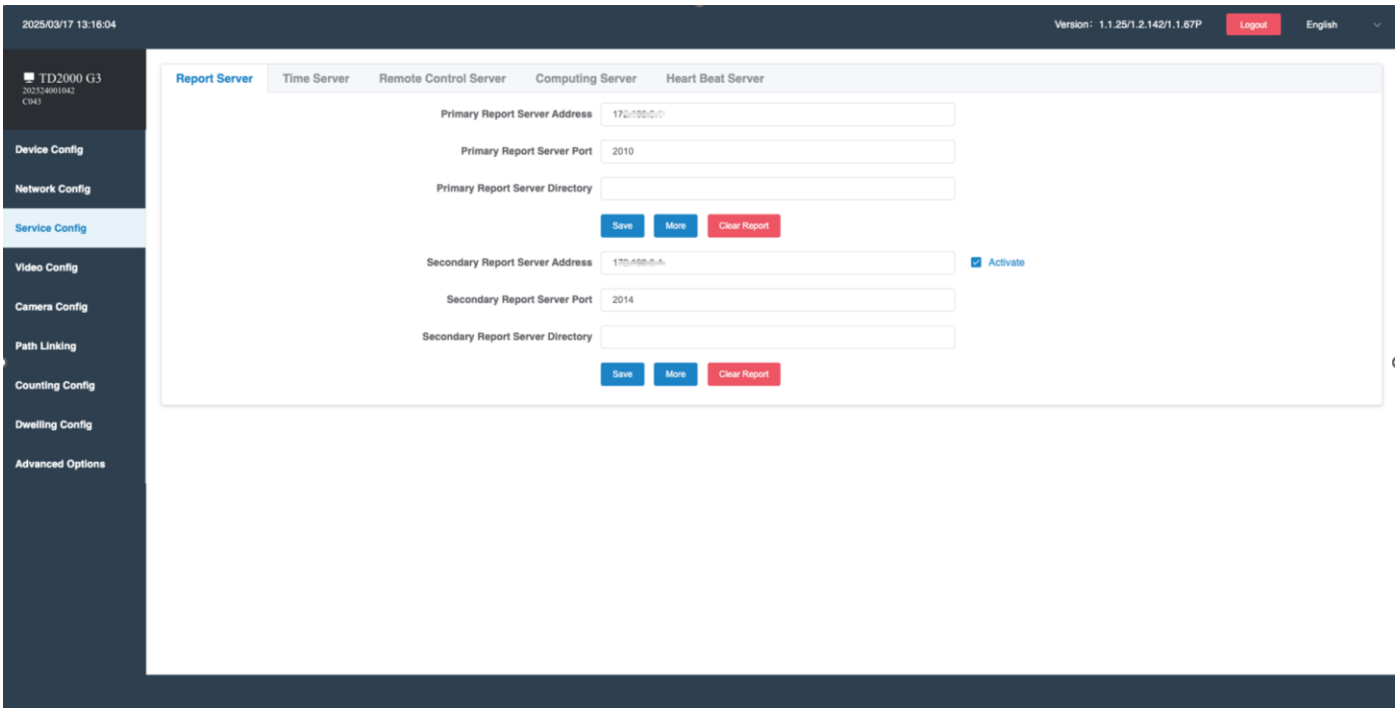

Primary/Secondary Report Server Address: Enter the primary/secondary data delivery destination server. Make sure to tick **Activate** should you use the Secondary Report Server.
Primary/Secondary Report Server Port: Enter the primary/secondary server port number to which the sensor should attempt to deliver data.
Primary/Secondary Report Server Directory: Enter your specified primary/secondary report server directory. (Note that server end configuration also needs to be set, contact our technical representatives for details when necessary).

[Save]: store the changes made above.
[Clear Report]: Clear all historical count data.
[More]: click the button and turn to the following page to set more relevant parameters for transmitting data to the Primary/Secondary Report servers.

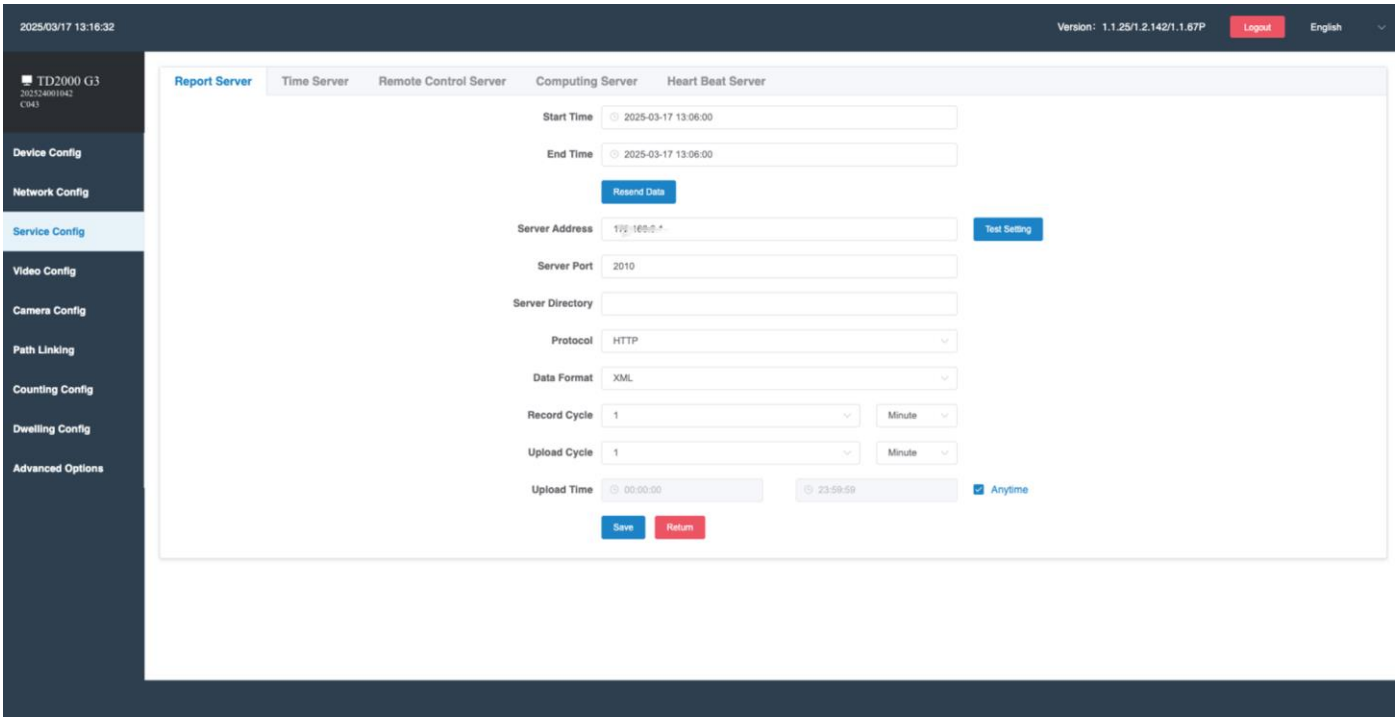

[Resend Data]: sensor can create on-demand report delivery requests for a specific range of dates and times in a designated format. This operation only resends the data within 90 days and can't resend if the cached data has been cleared. Set the **Start Time** and **End Time** accordingly and then click **[Resend Data]** for report delivery.
Server Address: set or view the server address of the Primary or Secondary Report Server accordingly
Server Port: set or view the server port of the Primary or Secondary Report Server accordingly
Sever Directory: set or view the server directory of the Primary or Secondary Report Server accordingly

Protocol: select the protocol for uploading reports from the listed options **(HTTP, HTTPS, FTP, FTPS, MQTT, MQTTS).**
Data Format: select the data format for uploading data from the listed options **(XML, Pipe Delimited, DAT, JSON).**
Record Cycle: select a record level (time interval of every 30 secs, 1 min, 5 mins, 10 mins, 15 mins, 30 mins or 60 mins) for the count report.
Upload Cycle: select an upload level (time interval of every 30 secs, 1 min, 5 mins, 10 mins, 15 mins, 30 mins or 60 mins) for the count report.
Upload Time: set data upload time. By default, **Anytime** is checked.

[Save]: Store the effects of a change.
[Return]: Return to the previous main page (**Service Config**).

Configure The Time Server

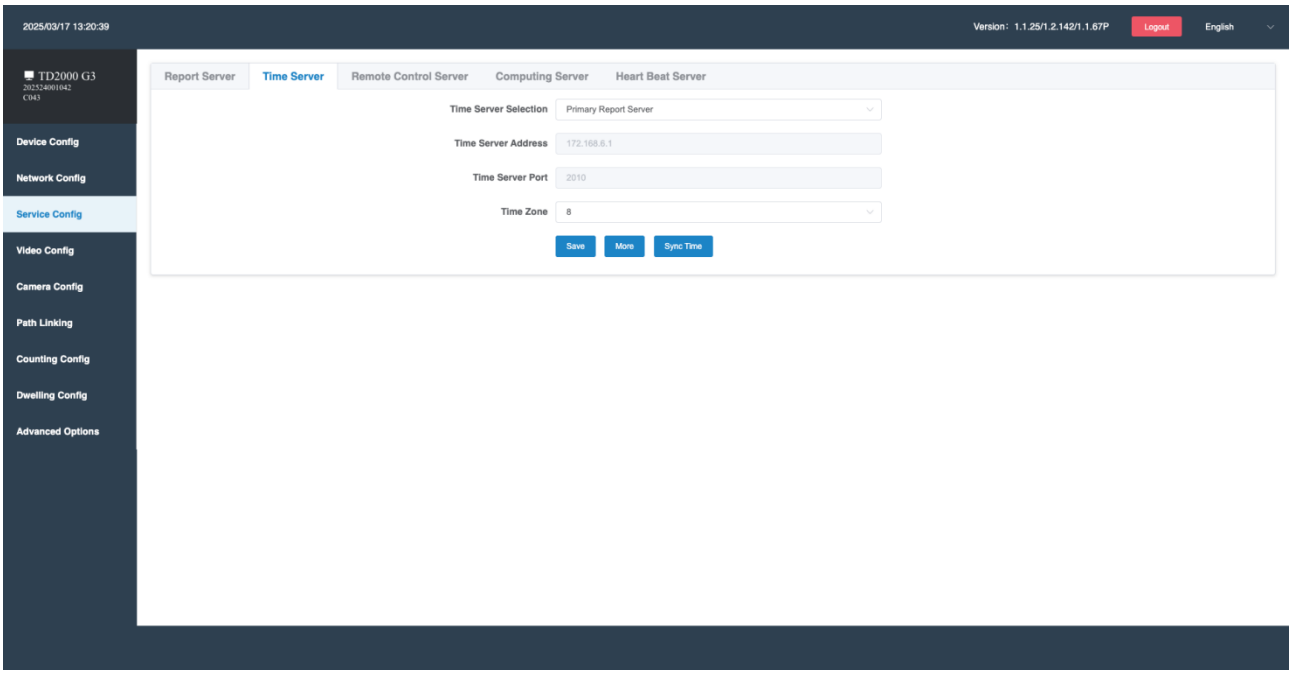

Time Server Selection: specify the server that you wish to use its time for synchronizing the date and time on the sensor by selecting from the listed options (Primary Report Server, Secondary Report Server, NTP Server).
Time Server Address: input the IP address of the Time Server.
Time Server Port: input the Port number of the Time Server.
Time Zone: select the appropriate time zone from the listed options.

[Save]: store the effects of a change.

[More]: click more to set time manually.

[Sync Time]: synchronize the date and time of the sensor with your selected server under properly functioning network situation. If there is no server connected on the site network, set time manually in **[More]**. Note that setting time manually is a one-time setting when time synchronization is not used, which is subject to time drift.

Configure The Remote Control Server

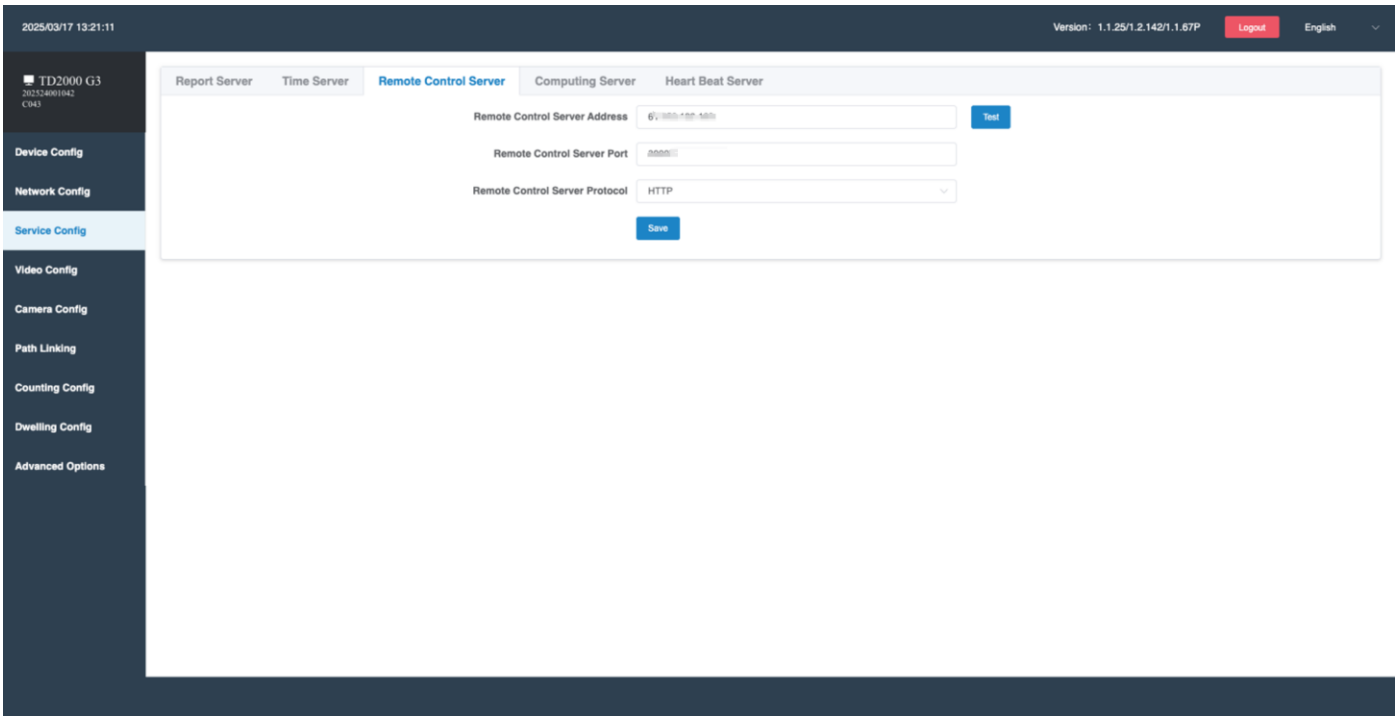

Remote Control Server Address/Port: enter the IP address and Port number of your Remote Control Server. Click **[Test]** to see if the connection with your Remote Control Server is successful or not.

Remote Control Server Protocol: select HTTP or HTTPS.

[Save]: Store the effects of a change.

Configure The Computing Server

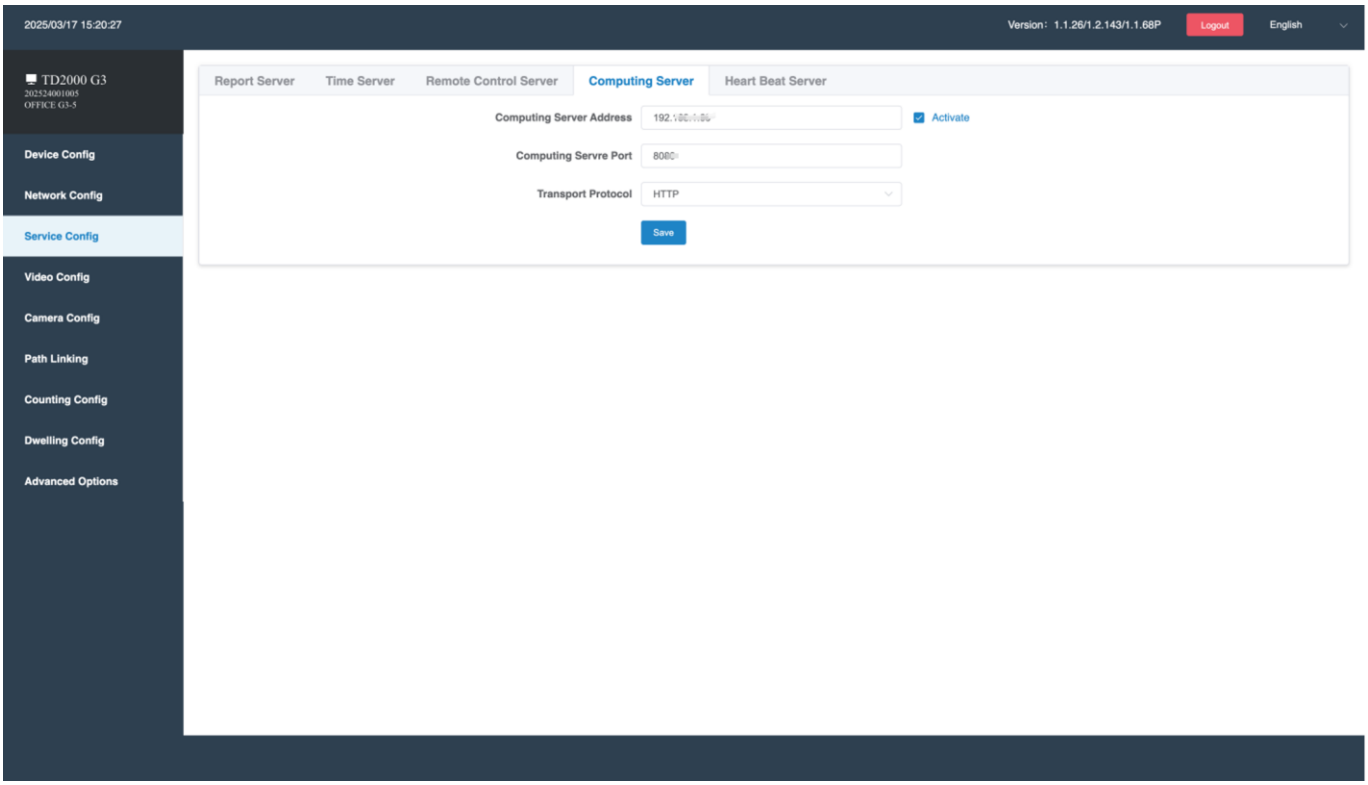

Computing Server Address/Port: enter the IP address and Port number of your Computing Server (i.e. the edge computing unit). Tick **[Activate]** to enable the server.

Computing Server Protocol: select HTTP or HTTPS.

[Save]: Store the effects of a change.

Configure The Heart Beat Server

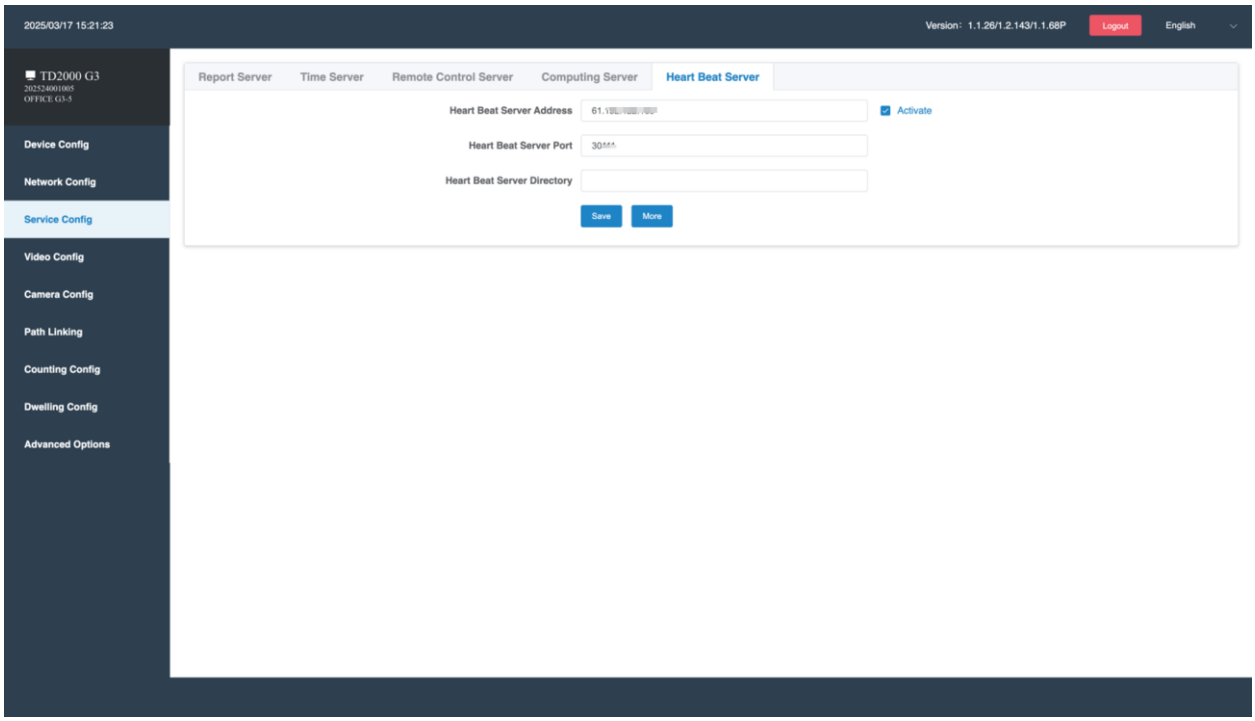

Heart Beat Server Address/Port: enter the IP address and Port number of the Heart Beat Server. Tick **[Activate]** to enable the server.

Heart Beat Server Directory: enter the directory of the Heart Beat Server.

[Save]: Store the effects of a change.

[More]: enter the following page for setting more parameters including protocol, data format, upload cycle and time, which are required for the Heat Beat Server to function.

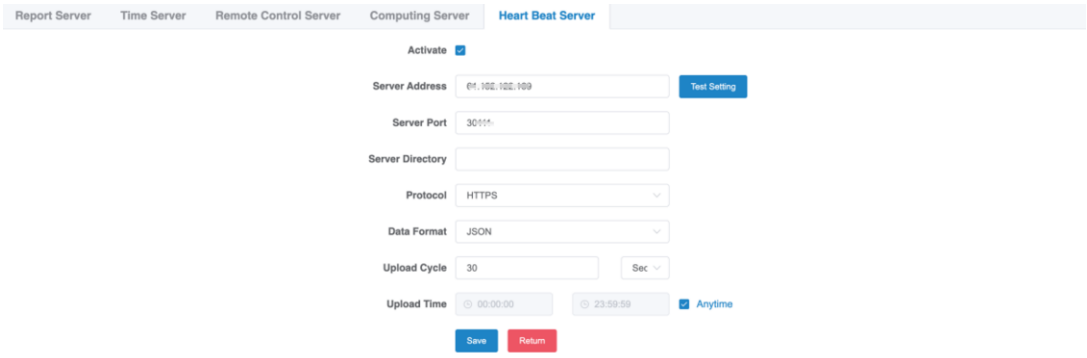

Protocol: select the protocol for uploading heart beat data from the listed options **(HTTP, HTTPS, MQTT, MQTTS).**
Data Format: select the format for uploading heart beat data from the listed options **(JSON** is supported. More options are under development**).**
Upload Cycle: set an upload level (time interval of every 30 secs for example) for the heart beat data.
Upload Time: set data upload time. By default, **Anytime** is checked.

[Save]: Store the effects of a change.
[Return]: Return to the previous main page (**Service Config**).

Video Configuration

The **Video Configuration** section includes two tabs for setting video capture and recording parameters. Note that the **Recording** tab is only available for sensors operating in **standard traffic counting mode**, as it configures recording directly on the sensor. In **advanced traffic counting mode**, the **Recording** tab is disabled because video recording is managed by the computing server instead of the sensors.

Recording

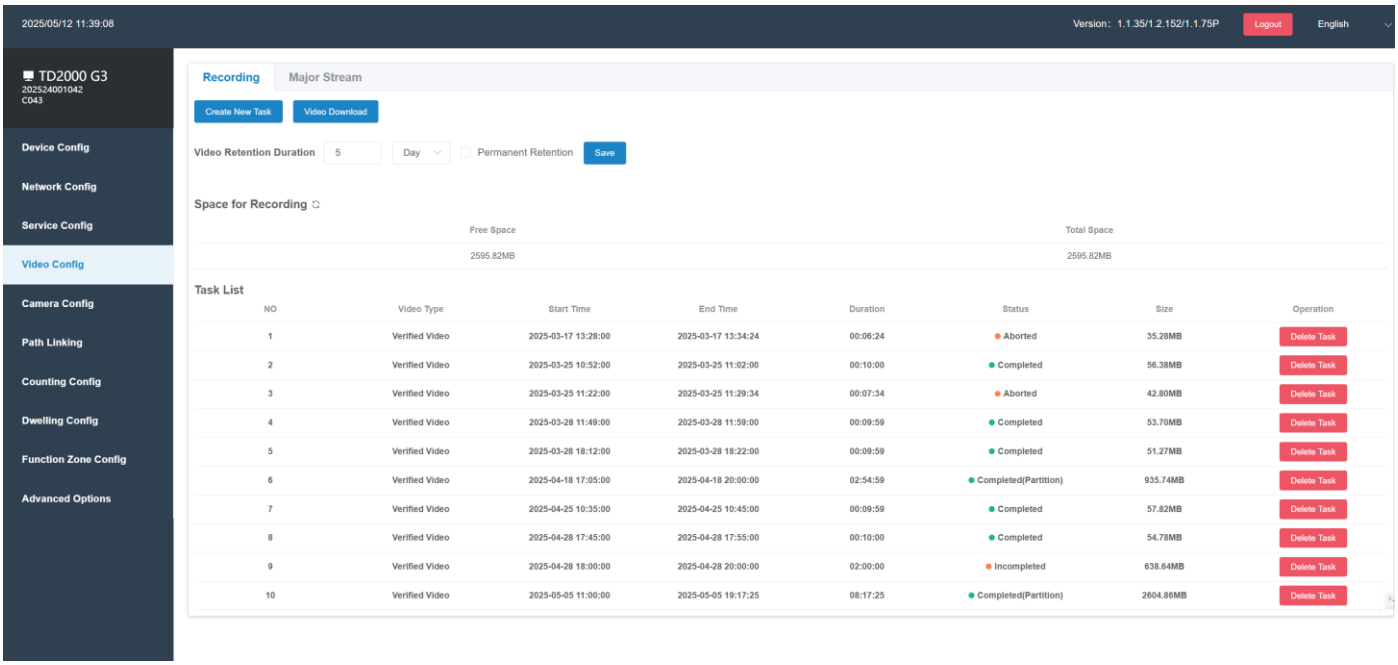

The Recording Tab is for setting parameters to record videos. By creating a new video recording task, you can record videos of different time lengths and keep them on device.

Video Retention Duration: Set the duration for which recorded videos are saved on the device. If the set duration (e.g., 5 days) is exceeded, the videos will be automatically deleted after that period. You can also choose to check the **Permanent Retention** option, in which case the recorded videos will be stored permanently unless manually deleted. Remember to click **[Save]** to store the duration settings.

Space for Recording: The device defaults to allocate **4096MB** for video storage. You can check the remaining Free Space and the total recording space.

Task List: This list displays a series of recording tasks that have been created.

Different types of video clips can be recorded. The **Original Video** refers to the video shooting original scene without drawing human detection frames and areas in the video. The **Verified Video** refers to the video drawn with human detection frames, a series of areas for counting purpose and a variety of traffic relevant information. The **Verified Video in Path Linking** refers to the video drawn with human detection frames, a series of areas for counting purpose and a variety of traffic relevant information, under the Path Linking mode.

Different status will be displayed in the **Task List** to show the completion status of the vide recording tasks. Please consult our technology representatives should you need assistances in understanding the meaning of each status.

[Create New Task]: Click this button to create a video recording task by selecting the **Video Type**, **Start Time**, and **End Time**. **Original Video, Verified Video** or **Verified Video in Path Linking** can be selected. Note the **Verified Video in Path Linking** only applies to sensors working in **Path Linking** mode.

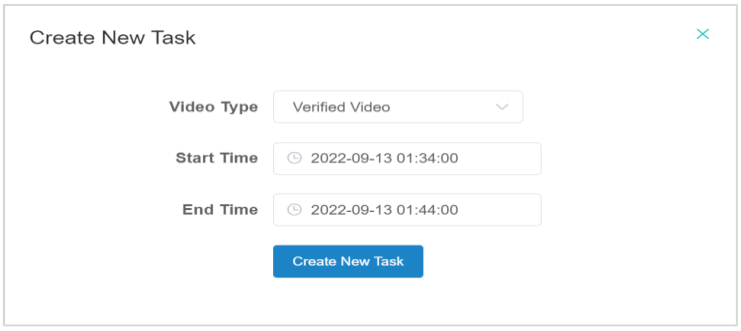

Video Download: Click the button to go to the video download page as below, on which you can download and delete the videos recorded. Video can be downloaded to your local computer or to your designated File Server, in which scenario you need to set the File Server parameters by clicking the **[File Server Setting]** button.

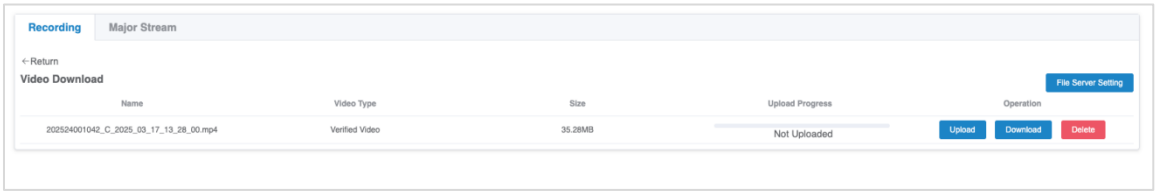

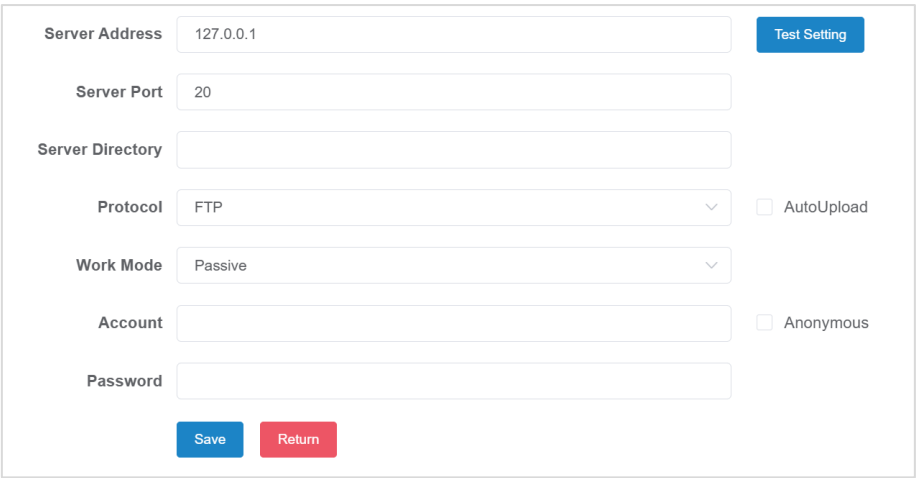

Major Stream

This tab (Major Stream) allows you to configure the video parameters for the main stream of the camera. Currently, the sensor supports a single stream encoded by H264 only.

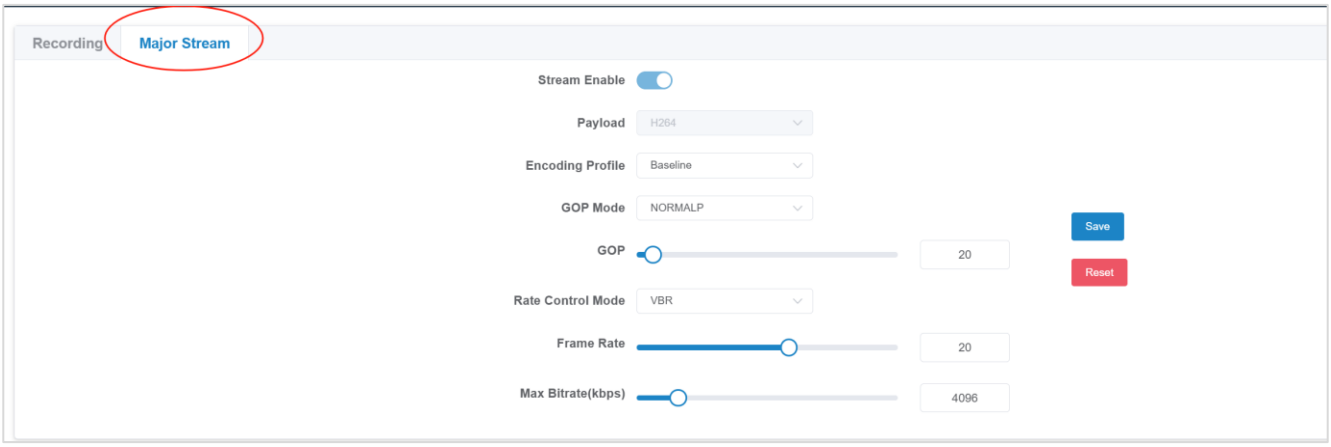

Note that for drop-down parameters like **Encoding Profile**, **GOP Mode, Rate Control Mode** and **Resolution**, after modification, you need to click the **[Save]** button to complete the modification. For slider configuration parameters like **Frame Rate**, **Max Bitrate**, you don't need to click **[Save]** as the modification takes effect immediately.

The parameters are described as follows:

Payload: H.264 is a high-performance video codec technology, with high compression ratio, flexible processing, ultra-low bit rate, saving network transmission bandwidth and storage space.

Encoding Profile: the higher the encoding level at the same bitrate, the higher the image quality. The **Baseline**, **Main profile**, and **High profile** are increasing in encoding level in turn.

GOP (Group of Pictures): the number of frames between two keyframes. The larger the GOP value, the smaller the stream and the lower the image quality; Conversely, the smaller the GOP value, the larger the stream and the higher the image quality.

Rate Control Mode:
VBR stands for variable bit rate, and **CBR** stands for constant bit rate. **CBR** keeps the bitrate the same throughout the encoding pr ocess, which may cause video mosaic. **VBR** adjusts bitrate (not exceeding the max bitrate) during encoding process. Its compression speed is relatively slow, but it can retain a better image quality and clarity in complex scenes.

Frame Rate: the number of frames per second of the video. The higher the value, the better of the image quality requiring more bandwidth and storage space.

Max Bitrate: indicates the upper limit of the encoding bitrate, if the bitrate is too low, the image quality will deteriorate.

Please set parameters according to the actual bandwidth situation.

The recommended parameter is configured as: GOP set as an integer multiple of the frame rate; When the resolution is 1920x1080, the max bitrate is recommended at 4096kbps; and the max bitrate is recommended at 2048kbps when the resolution is 1280x720. The max bitrate should be configured with reference to the actual situation of resolution, picture quality, bandwidth, etc., and it is not recommended to set it larger than necessary.

Camera Configuration

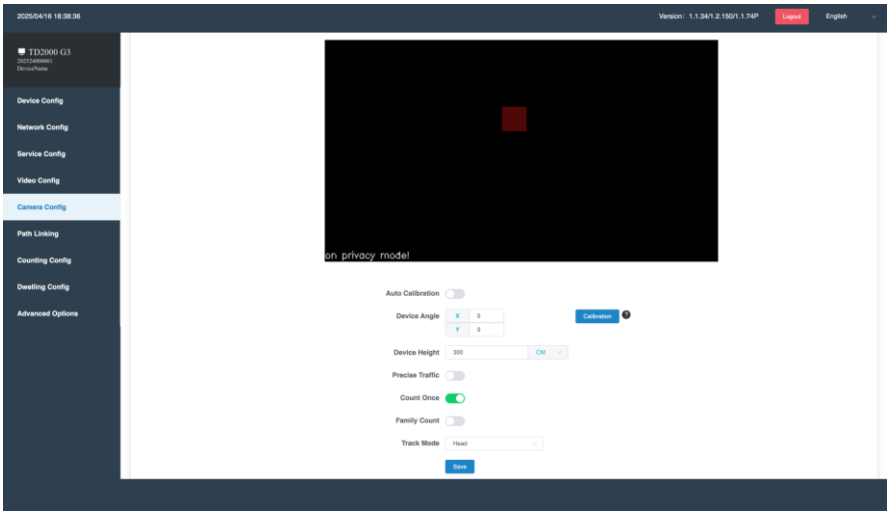

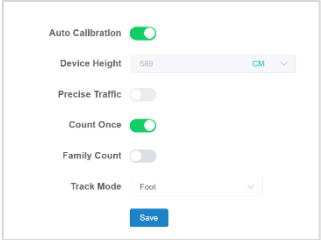

In terms of calibration, TD2000 (G3) supports **manual calibration** or **Auto Calibration**. Under manual calibration, you can set the device height and angle manually, or select a rectangular area on the floor in the center of the image (i.e. the red box as displayed in above image) and click **[Calibration]** for automatic measurement and input of the device height and angle (with slight manual adjustment on the values when necessary). Under **Auto Calibration**, it automatically detects the device's height and adjusts it to adapt to environmental changes, eliminating the need for manual input. **Note: 1)** After enabling auto calibration, the system typically requires **24 hours** to stabilize and function correctly; **2) Auto Calibration** may produce inaccurate results if people detected by the camera are not on the same plane (e.g., on different floors or staircases).

Device Angle: Set the mounting angles (**X** and **Y** axes accordingly) under manual calibration.

Device Height: Set the height within the range of **220cm-1400cm** based on the height of installation spot on site and the lens options (2.2mm standard lens supporting the maximum **800cm** installation height, or 8.0mm optional lens supporting the maximum **1400cm** installation height). You can choose either CM or Feet and Inches as the unit for height according to your needs.

Precise Traffic: Switch the button to enable Precise Traffic Counting which is the advanced feature of TD2000 (G3) to collect traffic counting data in precision with the technology of Re-ID.

Count Once: This feature is provided in order to set the sensor to count people only once if they cross over enter and exit areas multiple times while in the sensor field of view. If the **count once** box is not selected, a single person can cause multiple enter and exit counts if they stay in the sensor field of view and cross over the enter and exit areas multiple times.

Family Count: This feature allows you to count persons as a family unit when they are very close to each other. When the distance between them is less than 10cm, the sensor will combine the counting only for one as a family count. This request is usually performed for those retail clients as they might count the same family only once regardless of the number of people in the family.

Track Mode: This feature allows you to select to track either the head or foot of an object, which is especially useful when you specify/draw zones on the ground to determine the exact area where you want to track for dwelling statistics.

[Save]: Store the effects of a change.

Path Linking Configuration

Path Linking is used to combine multiple sensors while minimizing double counting in their overlapping areas, for the purpose of obtaining better accuracy in the case of wide entrance or large coverage area. This feature can be accessible through the navigating menu on the left and its configuration procedure is very simple.

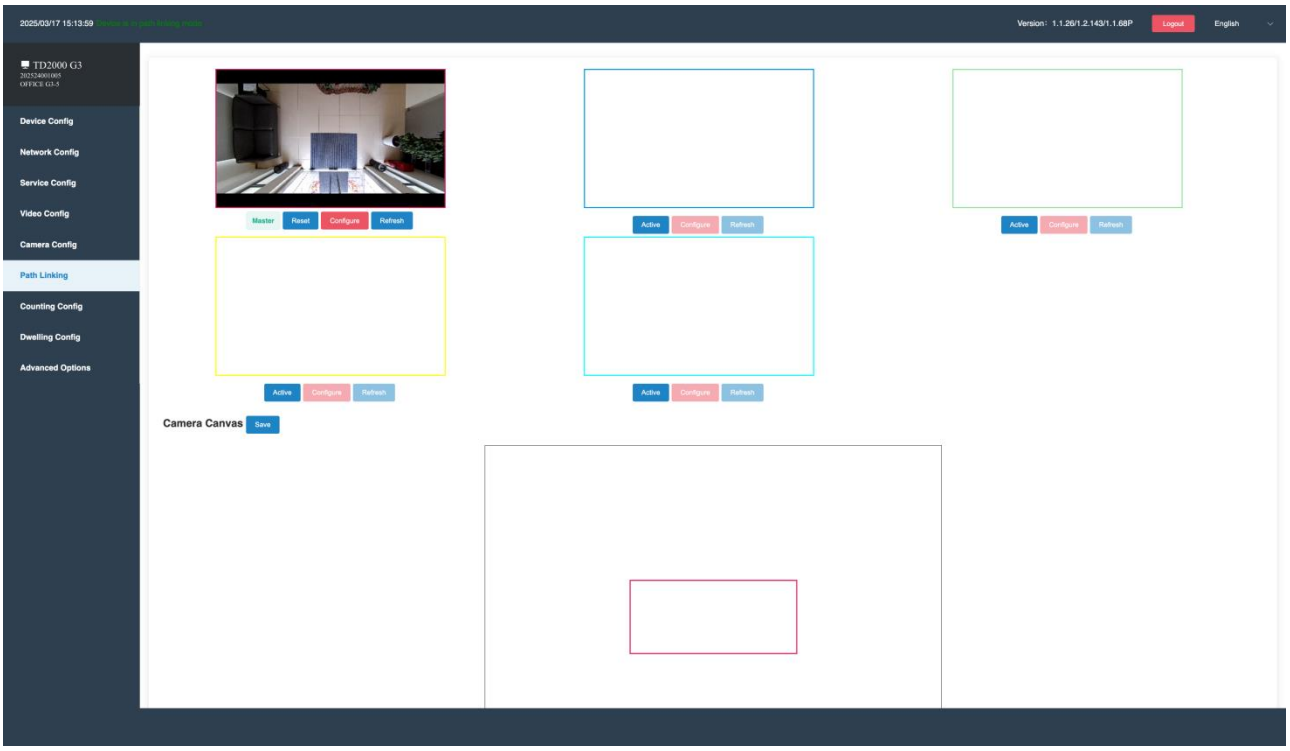

Path Linking sensors include one primary sensor (Master) and several slave sensors. Once the Master is activated, the slave sensors can be added. Notice that the firmware version of all slave sensors must be the same as the primary sensor and they have not been configured with Path Linking yet. If the sensor is being enabled with Path Linking, you may find the notification "Device is in path linking mode" on the top left corner of the above window.

Make sure the followings are set accurately and then follow the forthcoming steps to enable Path Linking.

1. Sensor height: you may check if the sensors' heights are set with reasonably correct value (in "**Camera Config**")
2. Image Magnification factor: can be set as **1X** only (in "**Camera Config**")
3. Tilt angle: now only can be set as 0° as tilt-installed sensors cannot be enabled with Path Linking
4. Tracking Pattern: forced to track **foot** (in "**Camera Config**")

Configuration Procedure

First, click the button **[Active]** to activate the primary sensor.

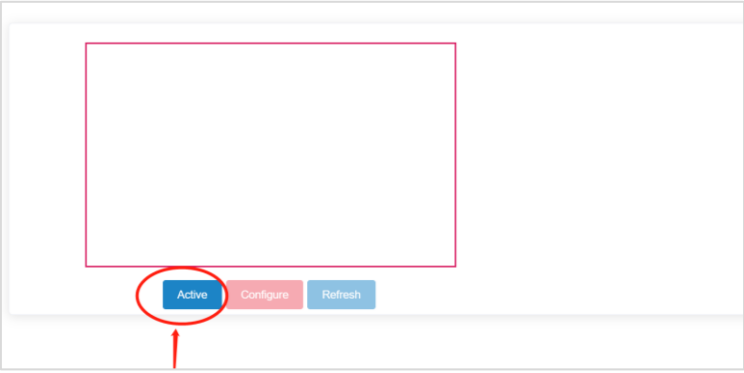

Then you will find the button of the primary sensor has been changed to "**Reset**" (as shown below). Now you can add up to **four** secondary sensors one by one in the rest squares by clicking the **[Active]** buttons under the squares. You may enter the slave sensors' IP address in the pop-up window.

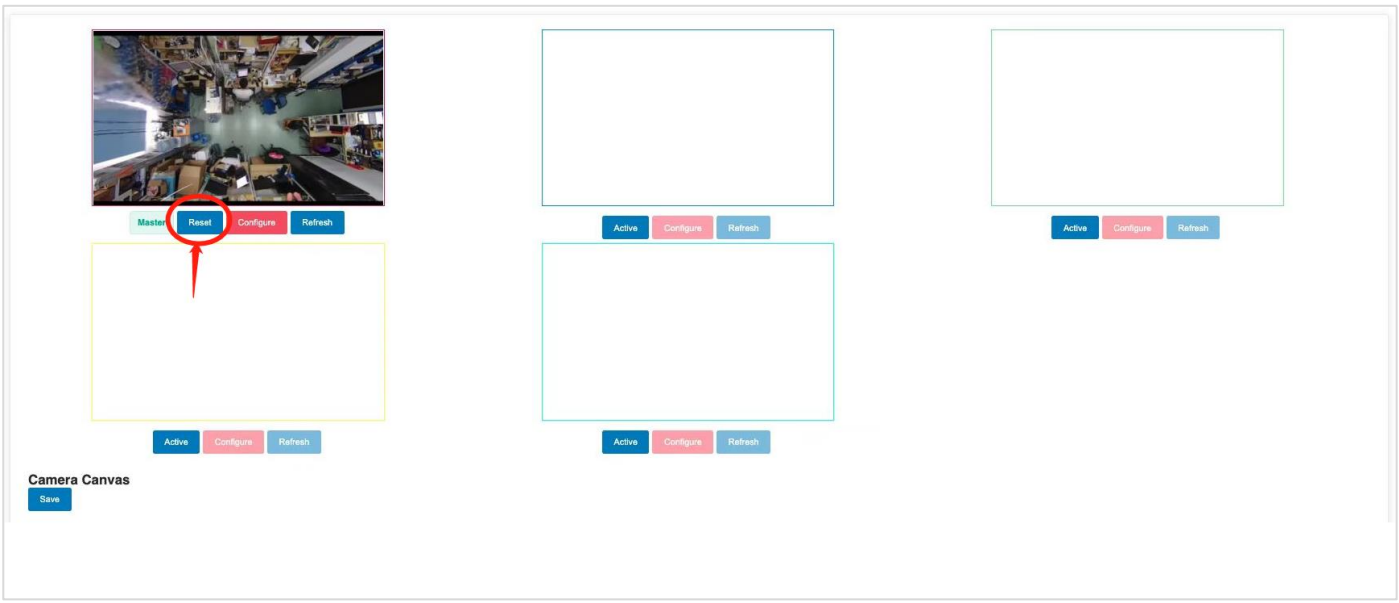

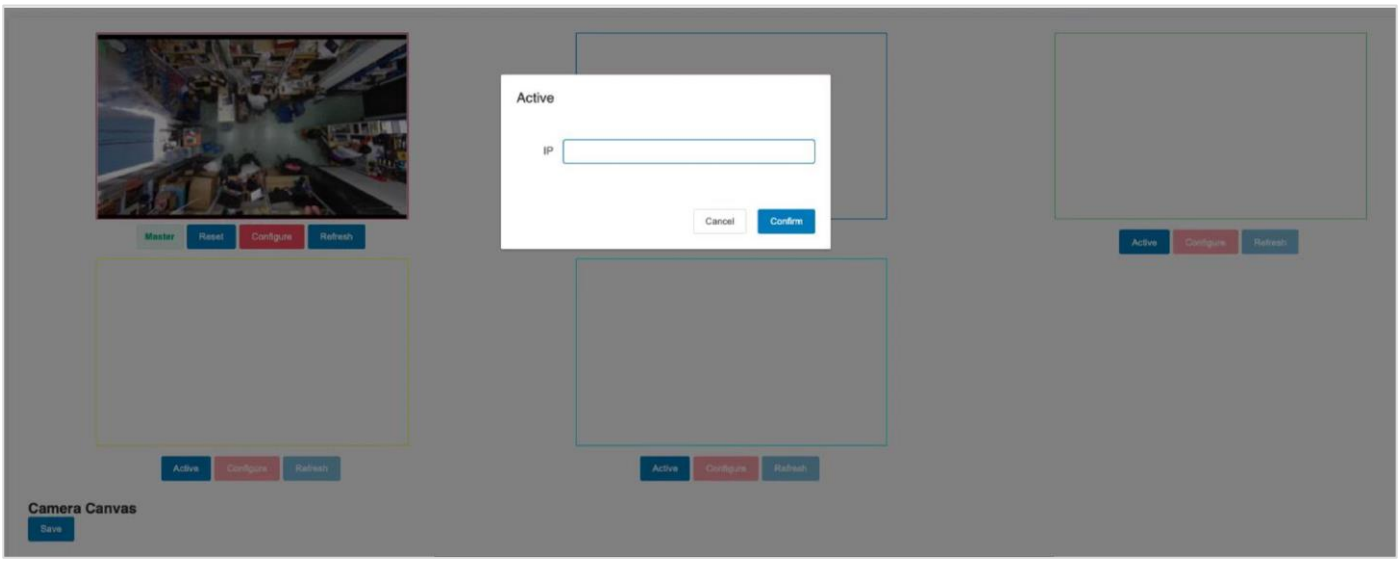

After the secondary sensors are added, their fields of view will be displayed accordingly in the "**Camera Canvas**" area of the configuration page, differed by various colors.

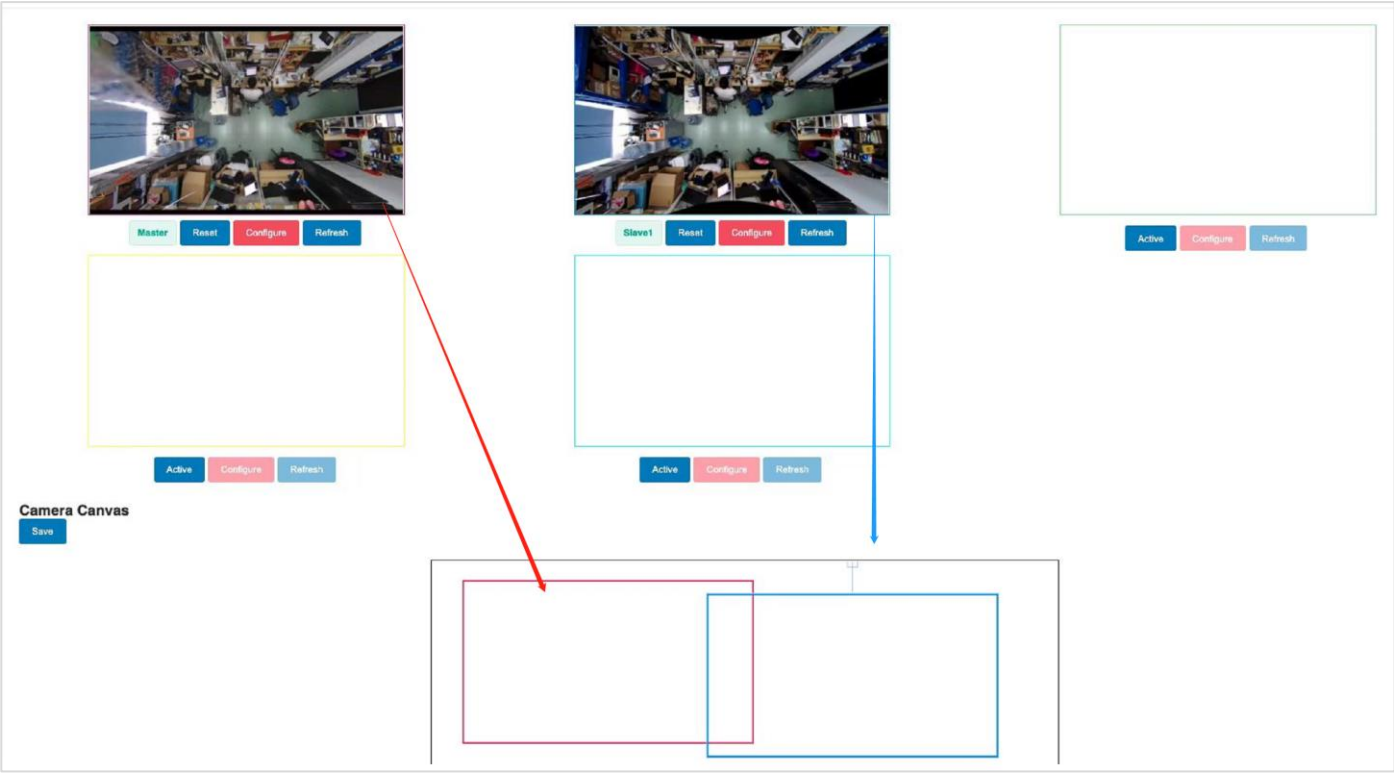

Next you can set the relative positions of path linking sensors. To combine two adjacent sensors, select **three** easy-to-identify reference points in their overlapping area and click them on the camera captured images (shown in the top half of the window), the selected points will appear accordingly in their fields of view (i.e. colored squares in the "**camera canvas**" area). Click the center points of the colored squares and drag them to overlap the selected points. Follow the same procedure to make sure all sensors are combined. If you need to re-select the reference points, just refresh the webpage. To facilitate overlapping the selected points, you may click **[Set]** to set the rotation angles for views from different angles.

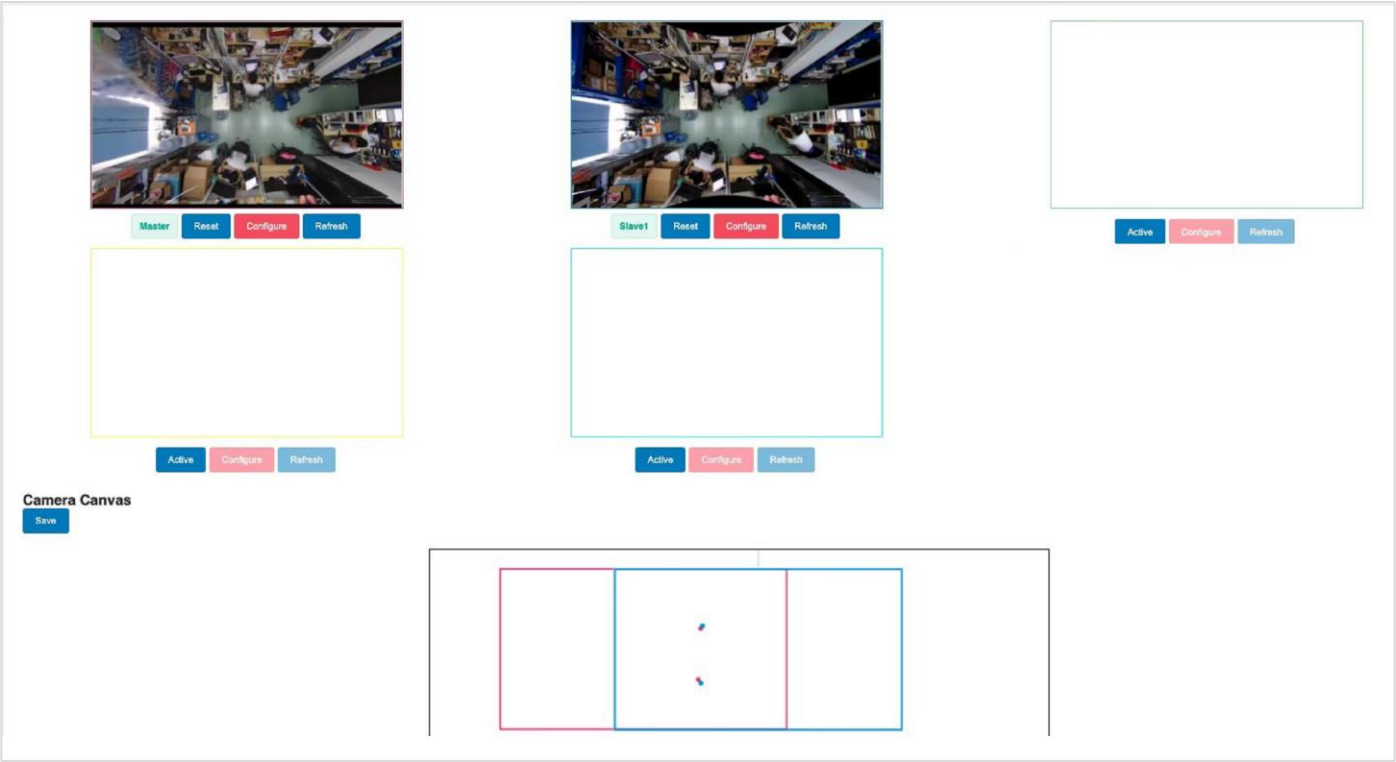

Once all sensors are combined properly, make sure click the **[Save]** button on the "**camera canvas**". Then you just need to configure the primary sensor correctly in **Counting Config**. No packets will be transmitted from the secondary sensors.

When Path Linking is enabled, don't change the parameters in "Network Config". The time server and the set time of the slave sensors shall keep unchanged as well.

Counting Configuration

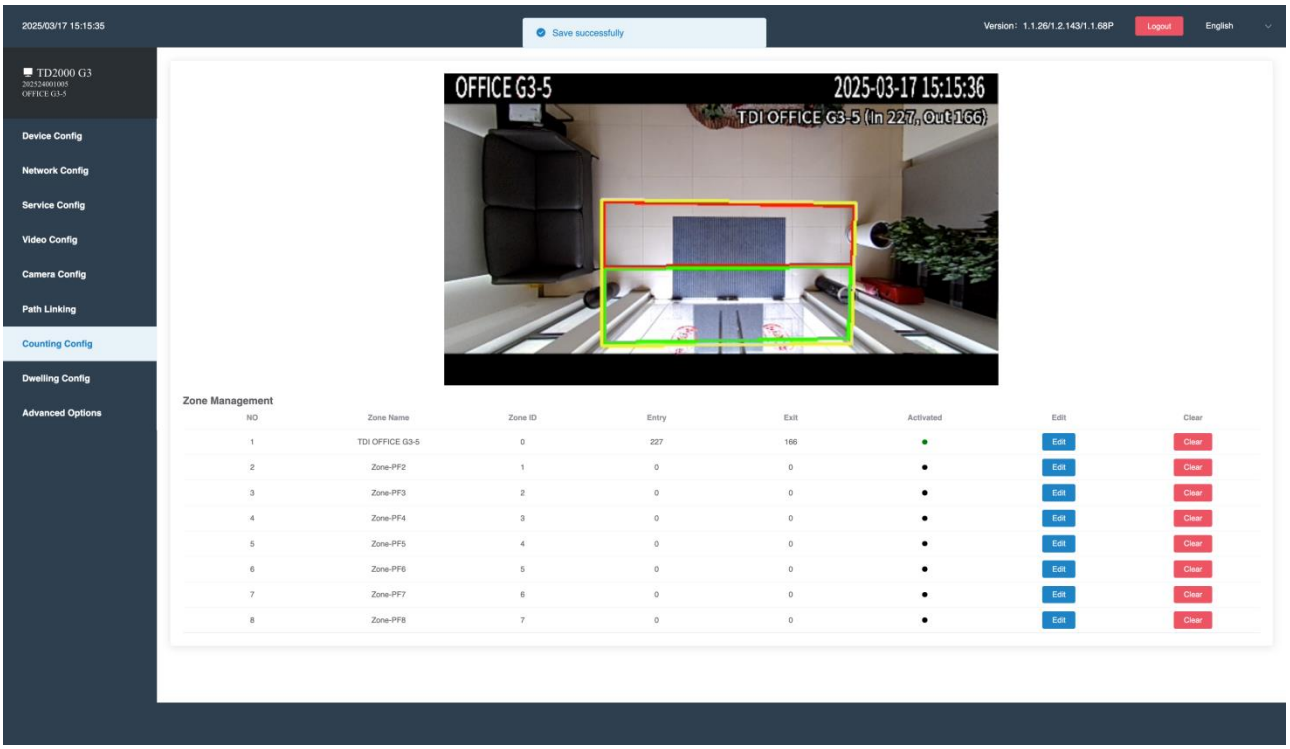

The Sensor can support setting up to 8 zones for counting In and Out traffic flow. **Entry/ Exit Numbers** represent real time statistics of In/Out traffic flow. **Activated** status shows whether a zone is active (displayed as a **green** dot) or not (displayed as a **black** dot).

[Edit]: Click the button into **Zone Editing** page.

[Clear]: Reset count number to 0.

Zone Editing

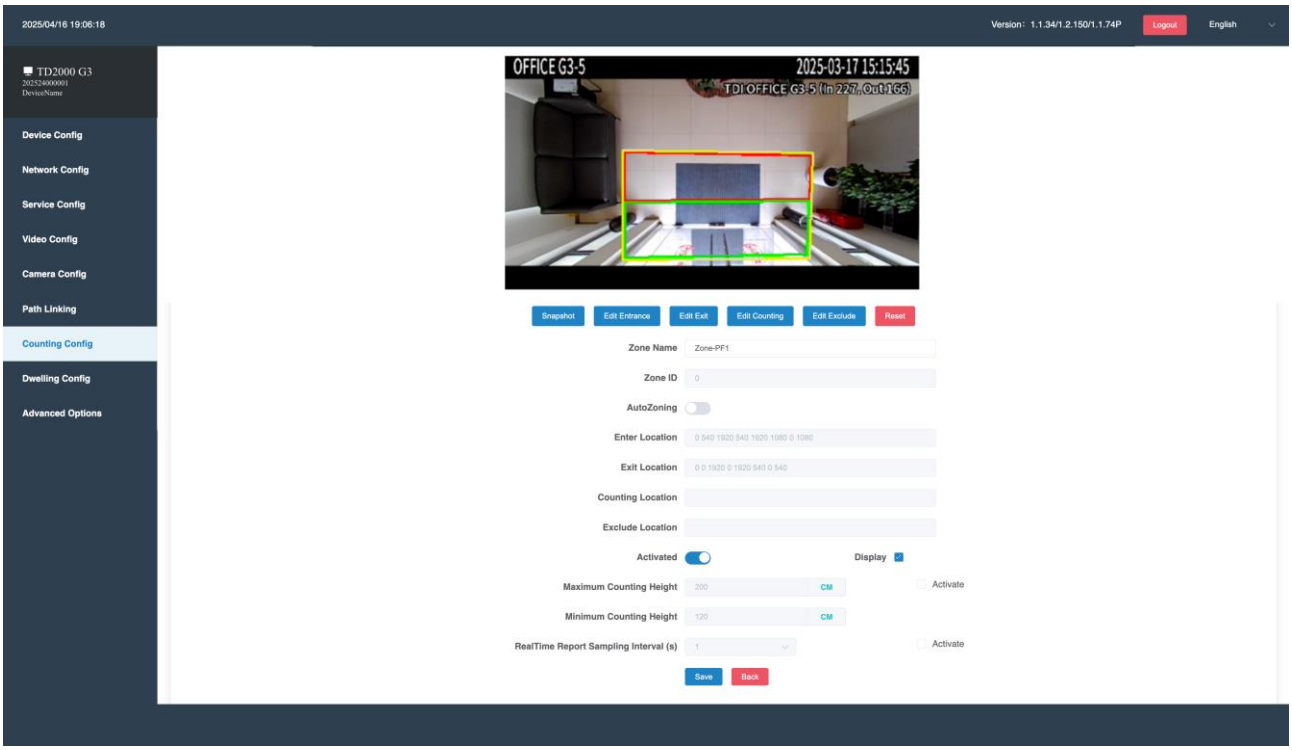

[Snapshot]: Click the button, the most recent screenshot of real-time monitoring images will display for adjusting parameters.

The sensor counts traffic in when people move from the **Exit** area into the **Entrance** area and counts traffic out when they move from the **Entrance** area into the **Exit** area. The **Entrance** area is close to site interior and the **Exit** area is close to site exterior. They are represented by drawing red line frame and green line frame respectively and shall not overlap with each other for accurate counting.



[Edit Entrance]: Draw the red line framed **Entrance** area by single-clicking points on the screenshot and double-clicking the final point so that all points are connected with lines to construct an automatic closed frame.
[Edit Exit]: Draw the green line framed **Exit** area by single-clicking points on the screenshot and double-clicking the final point so that all points are connected with lines to construct an automatic closed frame.
[Edit Counting]: Only people appearing in the Counting area will be counted. Follow the same drawing method as above to draw a closed, yellow Counting frame. The Counting area should cover the entrance and exit areas but not interlace with any of them.
[Edit Exclude]: Edit exclusion area can exclude employee channels or other areas that are not counted as statistics. If a person passes through the exclusion area before passing through the entrance and exit areas, it will be excluded. Follow

the same drawing method as above to draw an Exclude frame when needed. The Exclude area should be covered in the Counting area, close to Entrance and Exit areas but not interlace with any of them.
Example: the person as shown in below picture passes through the exclusion area and then walks out. In this scenario, the person will be excluded from the total footfall.



[Reset]: Clear all settings in this page.

Zone Name: User-configurable text string to identify the zone.
Activated: Enable/Disable the function of this zone.
Auto Zoning: Auto Zoning is an advanced feature of TD2000 (G3), which allows the device to automatically draw Entrance and Exit zones. After enabling this feature, the device will automatically determine the most suitable Entrance and Exit zones based on the recorded starting and ending points of pedestrian trajectories. **Note:1)** After enabling the auto-zoning feature, the device typically requires **24 hours** to record pedestrian trajectory start and end points before it can accurately draw the zones. 2) Auto-zoning requires setting the door line position, so the corresponding device installation direction must have the status light facing the interior of the store.

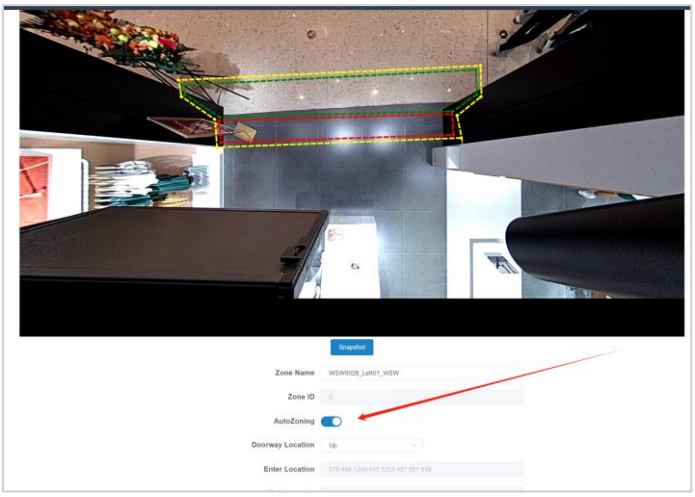

Display: If you setup and enable multiple counting zones there will be many green or red zones in the page. This feature allows you to choose to display or not display the drawn lines for each individual counting zone. Notice that it will only impact the display of this webpage. Even the counting zone is invisible, it will still count human normally.

Maximum/Minimum Counting Height: You can setup the valid counting object human height of this zone. Set the tallest in the "**Maximum Counting Height**" and the shortest in the "**Minimum Counting Height**". Don't forget to click on the checkbox of "**Activate**" to enable the filter rule.

Real-time Report Sampling Interval: Set the time interval for the report to receive data. Support intervals (seconds): 1/5/10/15/30/60 (S)

Dwelling Configuration

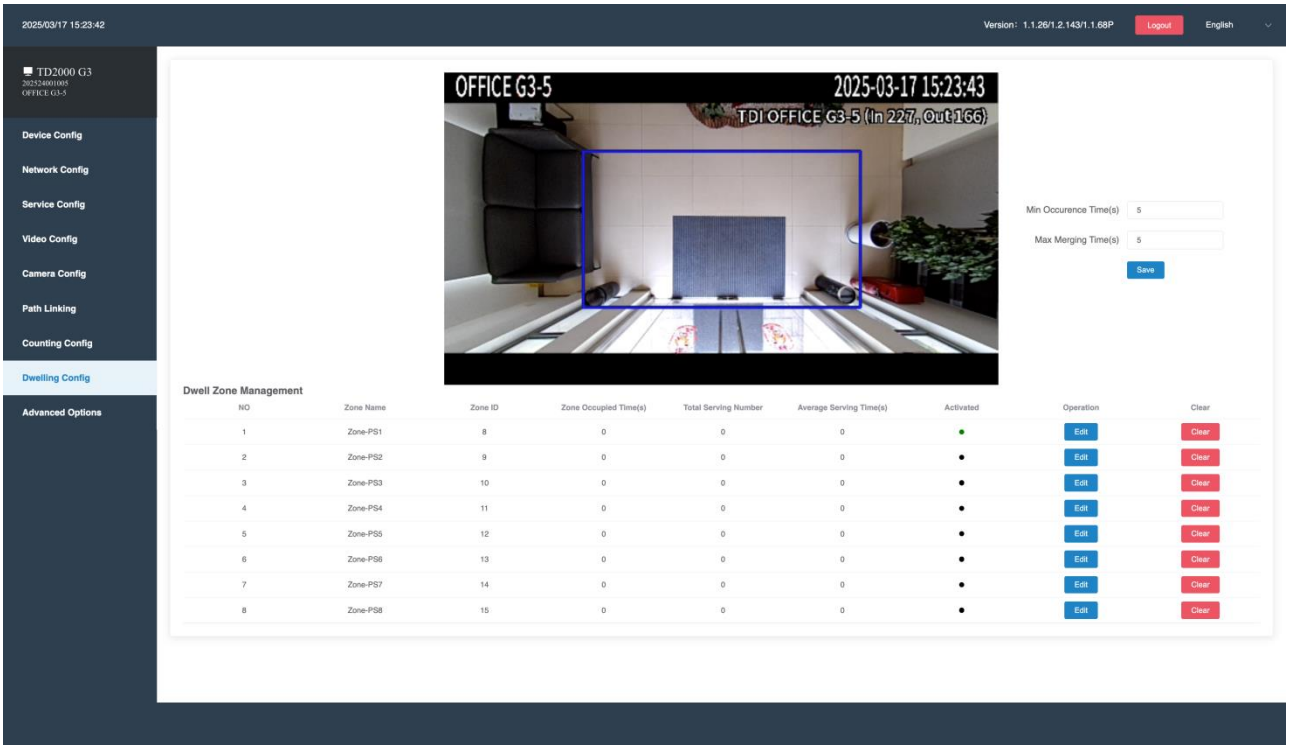

Dwell Zone Management: the Sensor can support up to 8 zones for collecting dwelling information.

Zone Occupied Time: time accumulates as long as the specific zone is not idle. Zone Occupied Time shows the total time.

Total Serving Number: Total number of clients served in a specific zone.

Average Serving Time: Average time served per client in a specific zone.

Min Occurrence Time: Set the minimum time a person shall stay in the zone. The Sensor counts the time and number only when the person stays in the zone longer than the Min Occurrence Time as set.

Max Merging Time: Set the maximum time a person may not show up in the zone. The Sensor will not count the person leaving the zone longer than the Max Merging Time.

[Edit]: Click the button into **Dwell Zone Setting** page.

Dwell Zone Editing

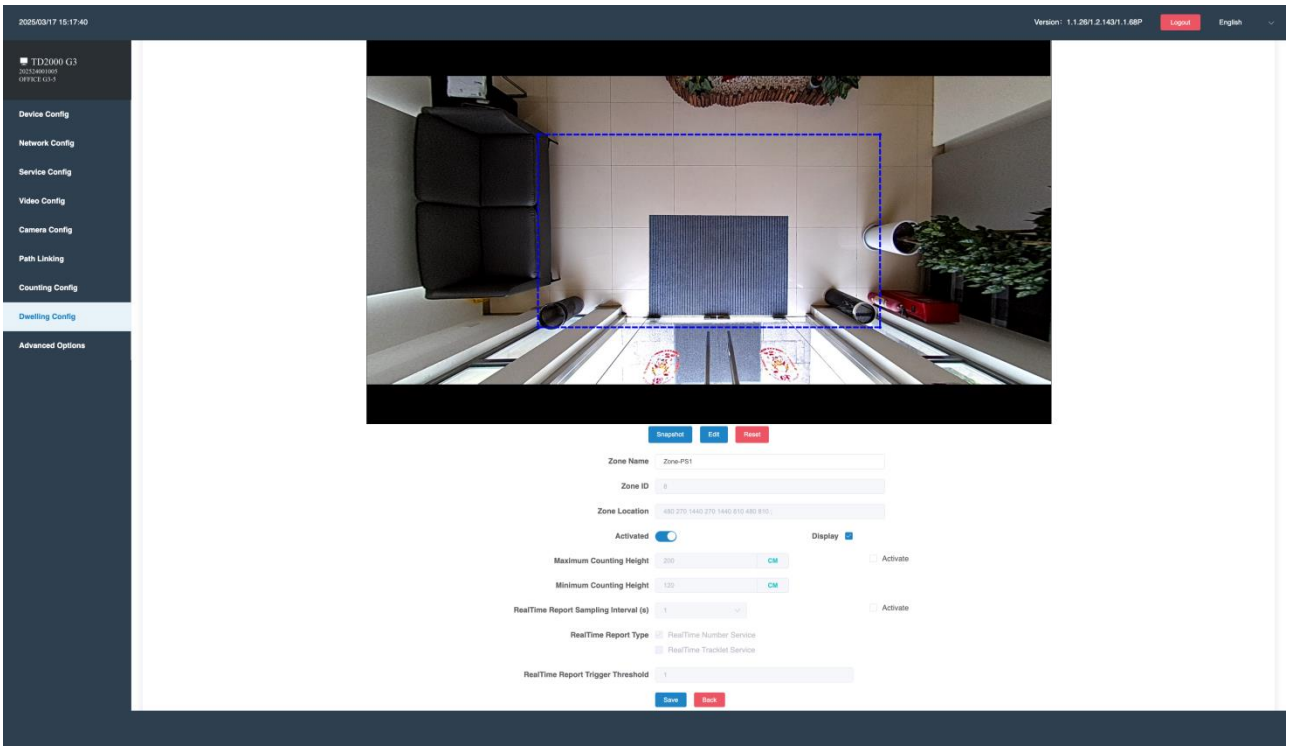

[Snapshot]: Click the button, the most recent screenshot of real-time monitoring images will display on screen for setting parameters of a dwell zone.

[Edit]: Draw the blue line framed zone by single-clicking points on the screenshot and double-clicking the final point so that all points are connected with lines to construct an automatic closed frame.
[Reset]: Clear all settings in this page.

Zone Name: User-configurable text string to identify the zone.

Activated: Enable/Disable the function of this zone. After a zone is set and activated, the sensor will count the number of people in the zone and the time they stay.
Display: If you setup and enable multiple counting zones there will be many blue lines in the page. This feature allows you to choose to display or not display the drawn lines for each individual counting zone. Notice that it will only impact the display of this webpage. Even the counting zone is invisible, it will still count human objects normally.

Maximum/Minimum Counting Height: You can setup the valid counting object human height of this zone. Set the tallest in the "**Maximum Counting Height**" and the shortest in the "**Minimum Counting Height**". Don't forget to click on the checkbox of "**Activate**" to enable the filter rule.

Real-time Report Sampling Interval: Real-time reporting can be enabled by clicking "**Activate**" . Set the time interval for the data reporting. Support intervals (seconds): 1/5/10/15/30/60 (S). The sensor will collect the dwelling information in this zone at the configured sampling interval and send real-time reports. The server settings for report transmission will follow the Secondary Server Configuration.

Real-time Report Type: There are two types: **RealTime Number Service** and **RealTime Tracklet Service**.

RealTime Number Service: Each time the configured sampling interval is reached, and the number of people staying exceeds the **RealTime Report Trigger Threshold**, and the count changes, the data will be recorded in a real-time report and sent immediately.

RealTime Tracklet Service: When someone stays in the zone, the system will record the pedestrian's real-time coordinates. A real-time report will be generated and sent immediately at the configured sampling interval.

RealTime Report Trigger Threshold: If the report type is set to **RealTime Number Service**, and the number of staying people exceeds this threshold, the system will record **every change in the count** and generate a real-time report.

Advanced Options

Device Management

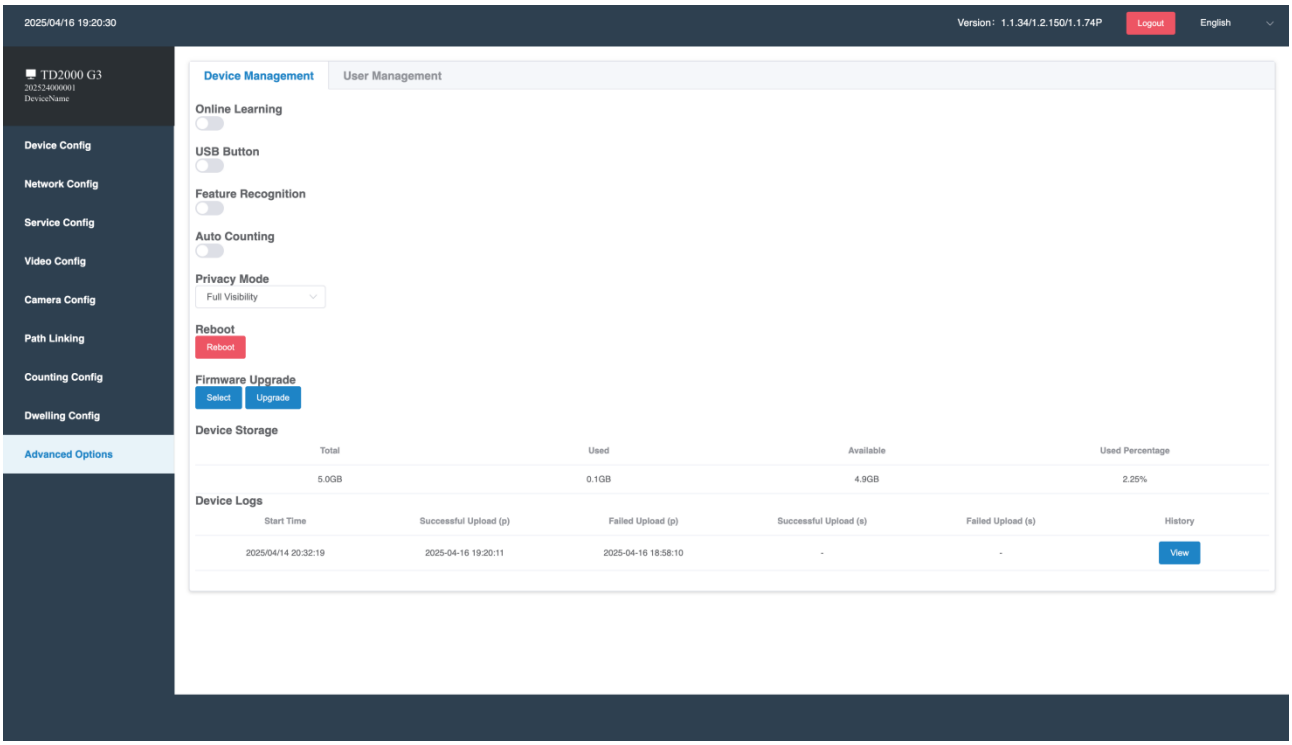

Online Learning: Switch the button to activate online learning for the purpose of improving its accuracy through deep learning technology. Make sure the Sensor is connected to internet for enabling the feature. When enabled, the device will record and upload a few minutes of video footage per day to the data center. Under strict data security protocols, TDI's R&D teams will use this data to improve algorithm accuracy. Note that this feature does not interfere with normal device operation. Depending on your local data privacy regulations, you may choose to enable or disable this feature at any time.

USB Button: it is used to enable add-on features such as staff exclusion with a USB button plugin (which shall be ordered individually). You need to switch on the button to enable such feature.

Feature Recognition: it is used to enable add-on features such as staff exclusion or gender recognition via the device embedded deep learning capabilities without relying on Re-ID or any extra devices. Note that if **Precise Count** is enabled, the **Feature Recognition** cannot be turned on as the **Precise Count** will realize feature recognition with the Re-ID technology.

Auto Counting: By enabling **Auto Counting, Auto Calibration**, and the **Auto Zoning** function for the 1st counting zone , the device will automatically perform In and Out traffic counting.

Privacy Mode: The device supports three optional privacy modes: Full Visibility, Low Resolution, Black Masking.

Full Visibility (Default Mode):
- Displays high-definition images
- Applies masking over the heads for privacy protection

Low Resolution:
- Displays low-resolution images

Black Masking:
- Shows completely blacked-out images
- Video recording is disabled in this mode

Reboot: Click the button **[Reboot]** to reboot the sensor.

Firmware Upgrade: Update the firmware on sensor

- Click **[Select]**
- Choose firmware file
- Click **[Upgrade]**
- Wait for **60** seconds until the sensor reboots automatically after upgrading

Device Storage: shows how the device space is being occupied.

Device Logs: shows the main logs such as the start time and failure information of the device.

History: Click **[View]** to see other relevant logs for technician troubleshooting.

User Management

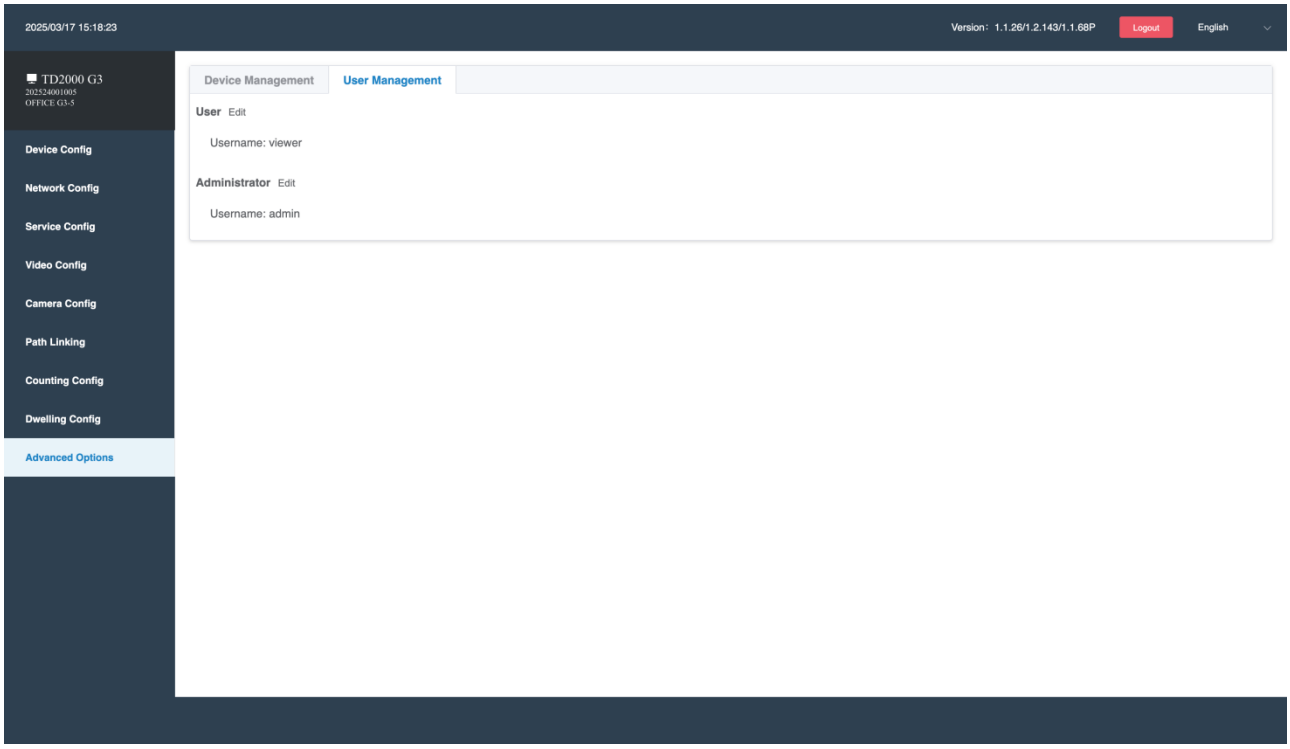

User: Click the button **[Edit]** to change the user's username and password. Normal users can only access web pages, only view and cannot modify.
Administrator: Click the button **[Edit]** to modify the administrator's username and password. Administrators can not only view web pages, but also modify various functional parameters.

Other Instructions

Hidden Info Configuration

Under normal usage scenarios, certain configurations accessible via the hidden page are not required. If needed, you can access these settings by appending **'/hidden'** to the device's URL in your **browser's address bar** and pressing **Enter**. This will direct you to the configuration page.

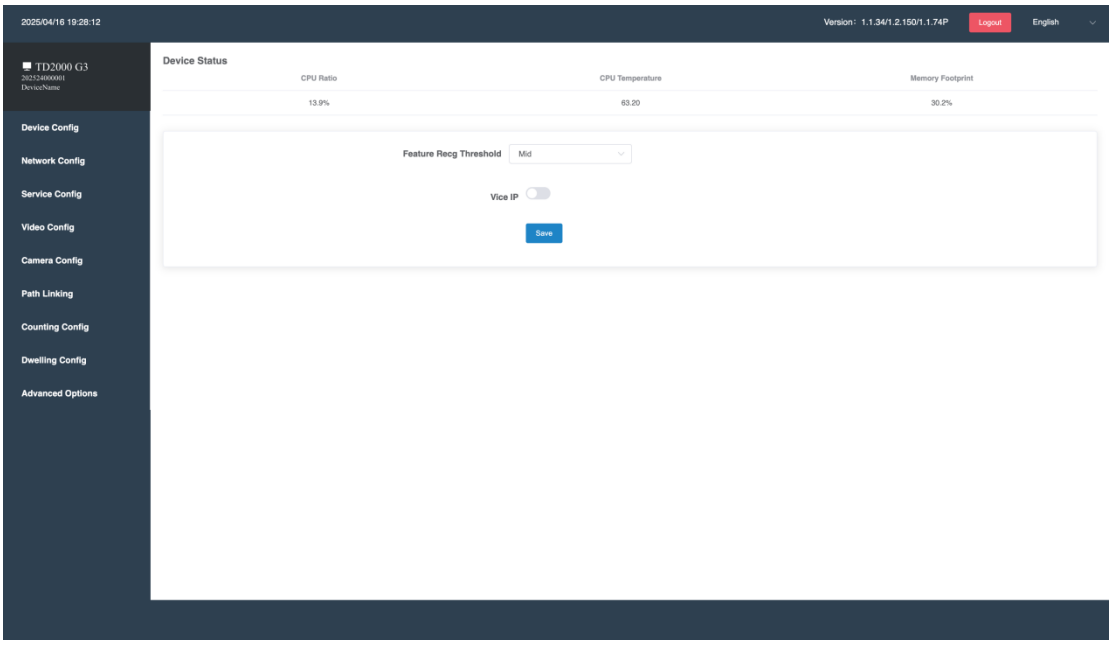

Feature Recognition Threshold: Adjusting this selection affects the recognition rate and accuracy of feature identification.

Low:

- Faster recognition, but higher chance of errors.
- High recognition rate, low accuracy.

Mid (Default):

- Balanced recognition rate and accuracy.

High:

- Slower recognition, but more precise.
- Low recognition rate, high accuracy.

Vice IP:

- Enable the device's secondary IP.
- Requires verification to confirm the specific device's secondary IP.

Wi-Fi

Wi-Fi is an add-on feature to the product. Once you purchased the Wi-Fi dongle/adapter, then you need to connect it to the device. After plugging in, you can access the device's Wi-Fi configuration page, simply by adding '/wifi' to the device's access address. Press Enter, click on **'Active',** and then enter the Wi-Fi SSID and Wi-Fi Password. You can input other required parameters (IP Address, DHCP or not, Subnet Mask, Gate Way, DNS) in the configuration page.

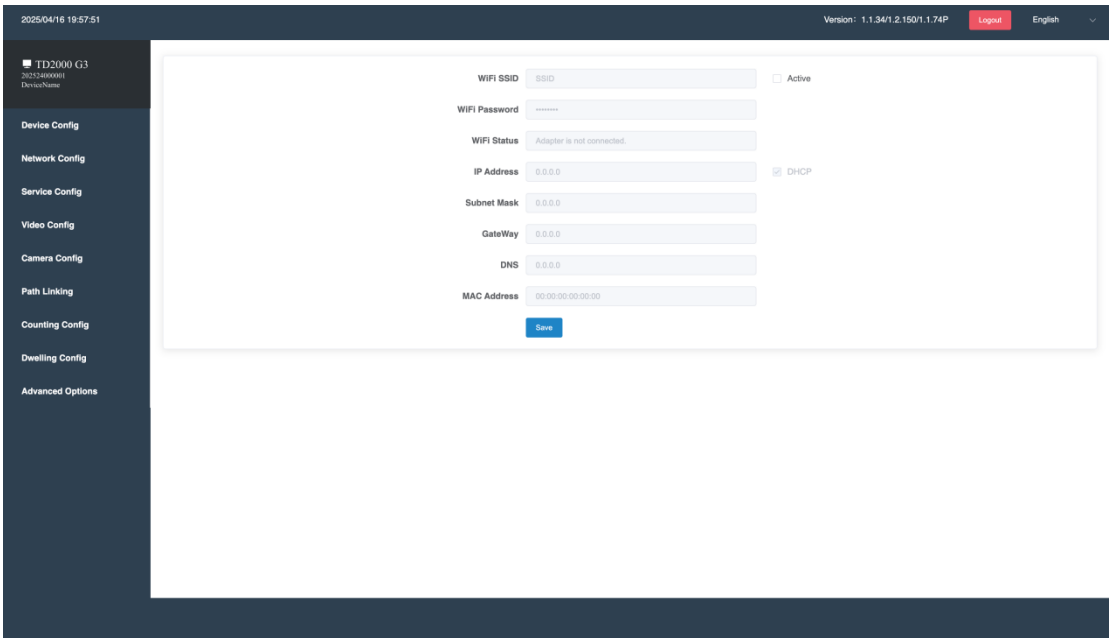

RTSP Video Streaming

The device has been designed with the support of RTSP video streaming. Pulling video streams via the RTSP protocol are as follows：

Main Stream: rtsp://username:password@ip:port/stream1

Sub Stream: rtsp://username:password@ip:port/stream2

If a computer is installed on the same network as the IPC and you want to access the device, you can use VLC media player to view the IPC's video feed. Simply open VLC, choose 'Open Network Stream,' and input the camera's RTSP streaming address (see below for reference).

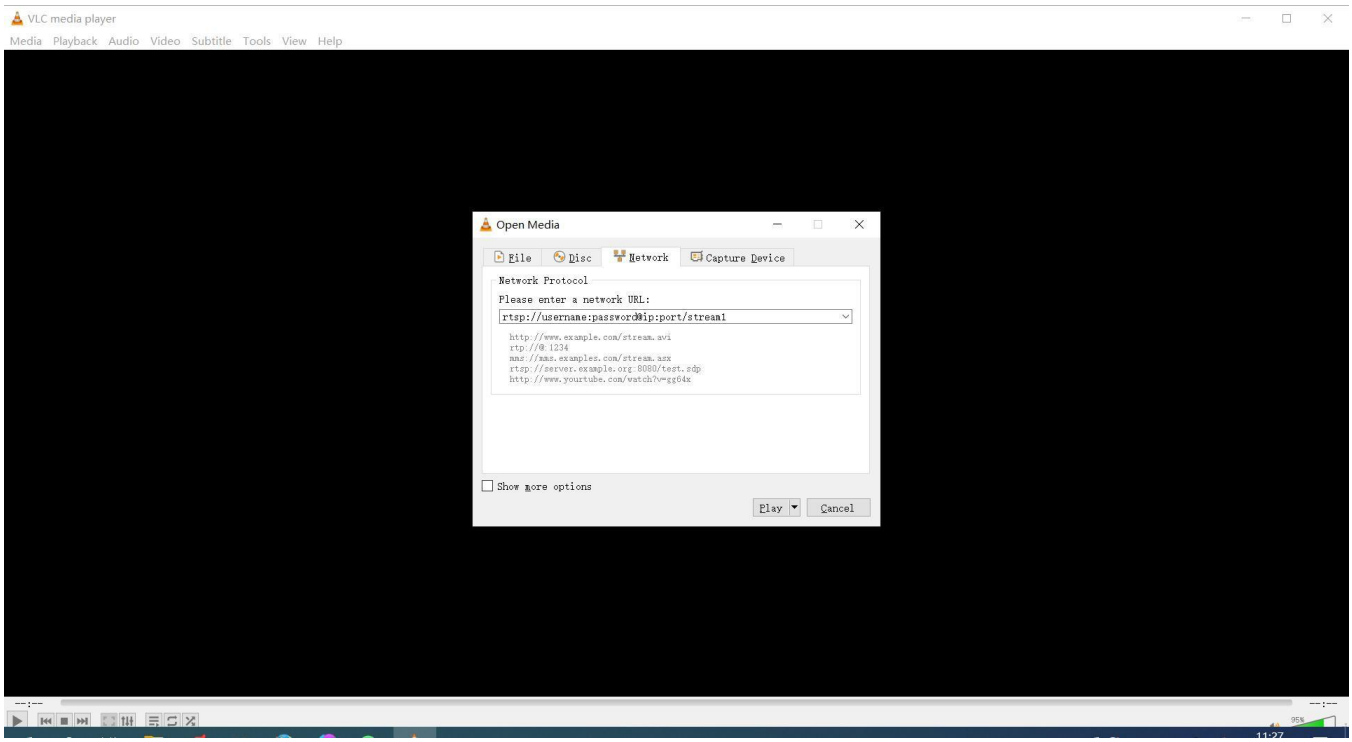

Product Appearance and Interfaces

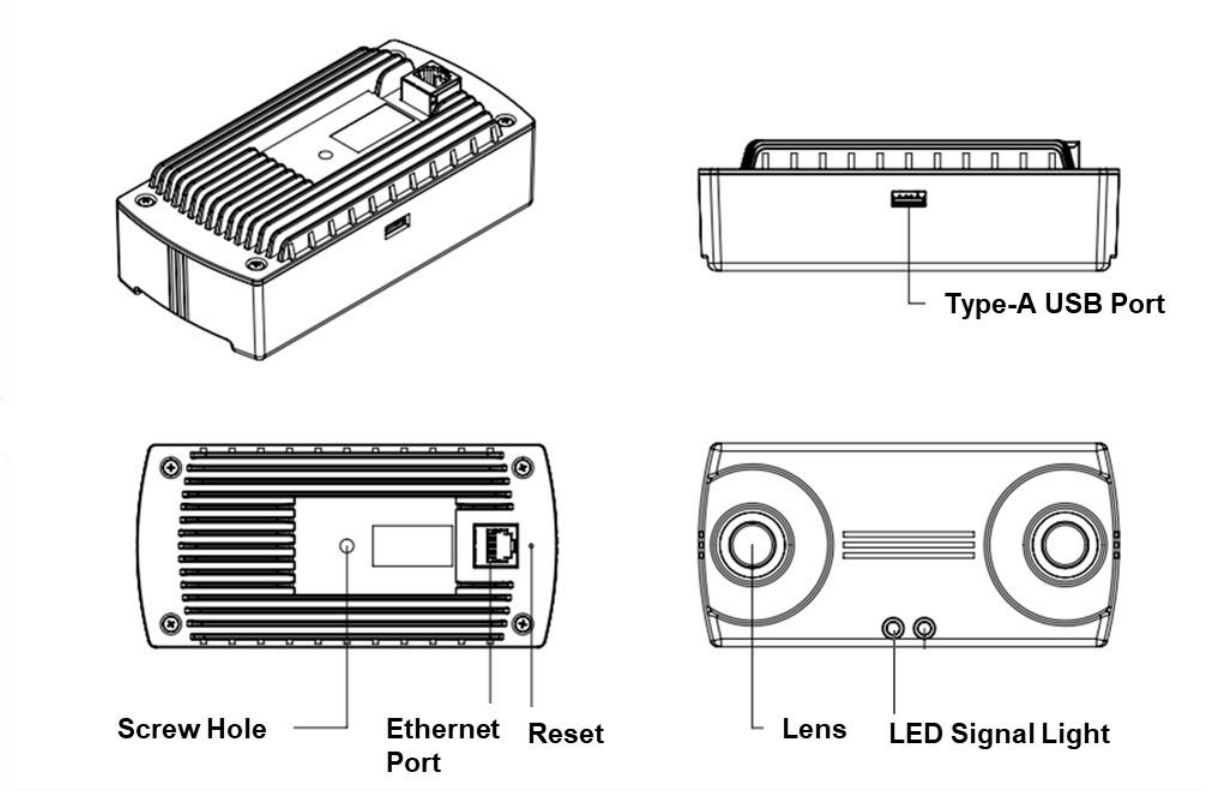

Signal Light Indicators

The Sensor can be diagnosed by observing its signal lights after being installed and configured through the web interface. There are two signal lights on the device. The signal light on the **left (refer to the above picture)** indicates different status of device with three colors: red, orange, and green.

Device Status	Color of Signal Light
Rebooting or applications not started	Constant red light
Functioning properly	Green light flashing every 3 seconds
Failed to connect to both primary and secondary servers	Orange light flashing every 3 seconds
Failed to connect to the primary server	Green light flashing twice, then turning off for 3 seconds
Failed to connect to the secondary server	Green light flashing three times, then turning off for 3 seconds
Factory status	Red light flashing every 2 seconds